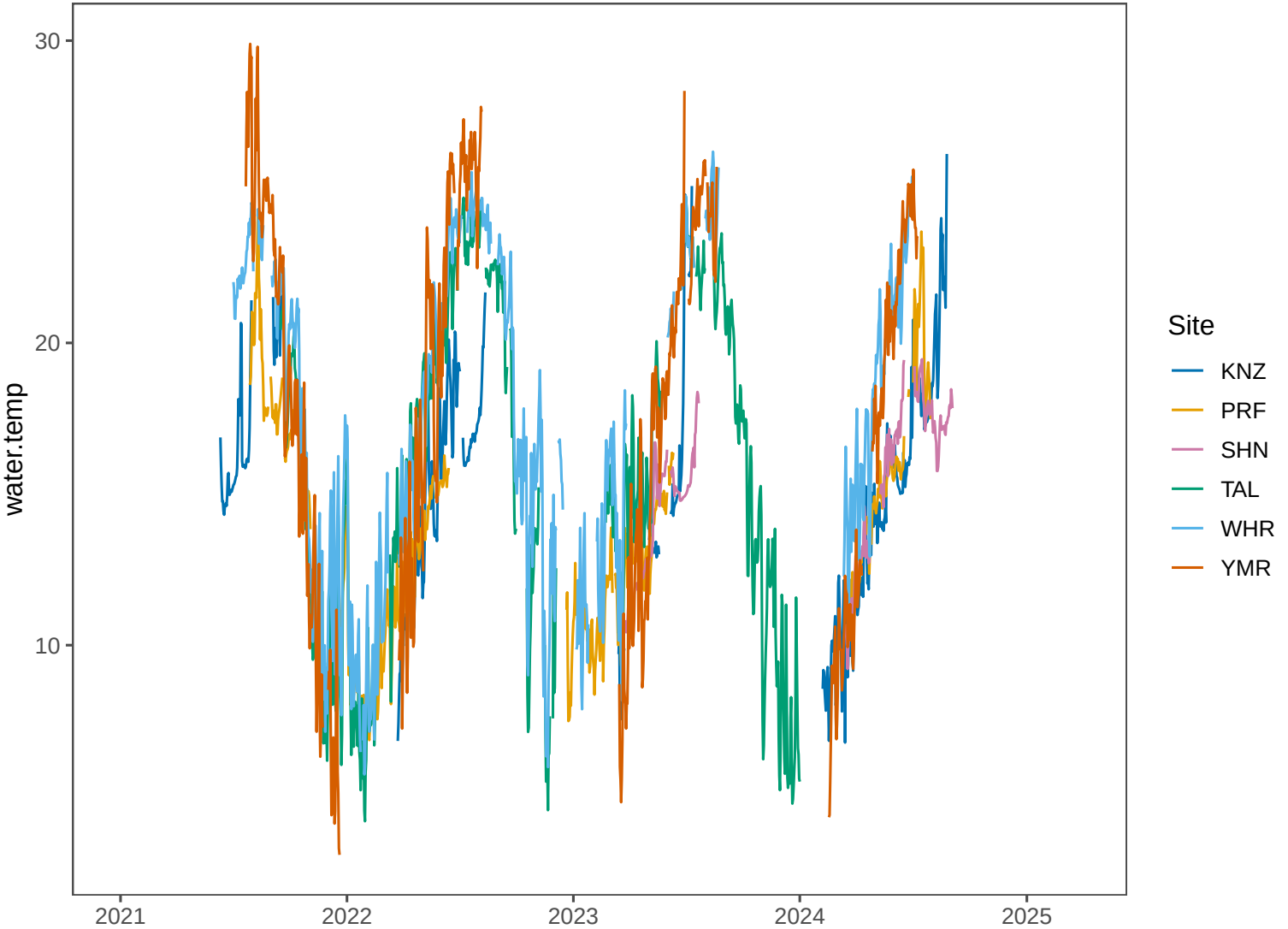
water.temp
30
20
10
2021
2022
2023
2024
2025
Site
KNZ
PRF
SHN
TAL
WHR
YMR

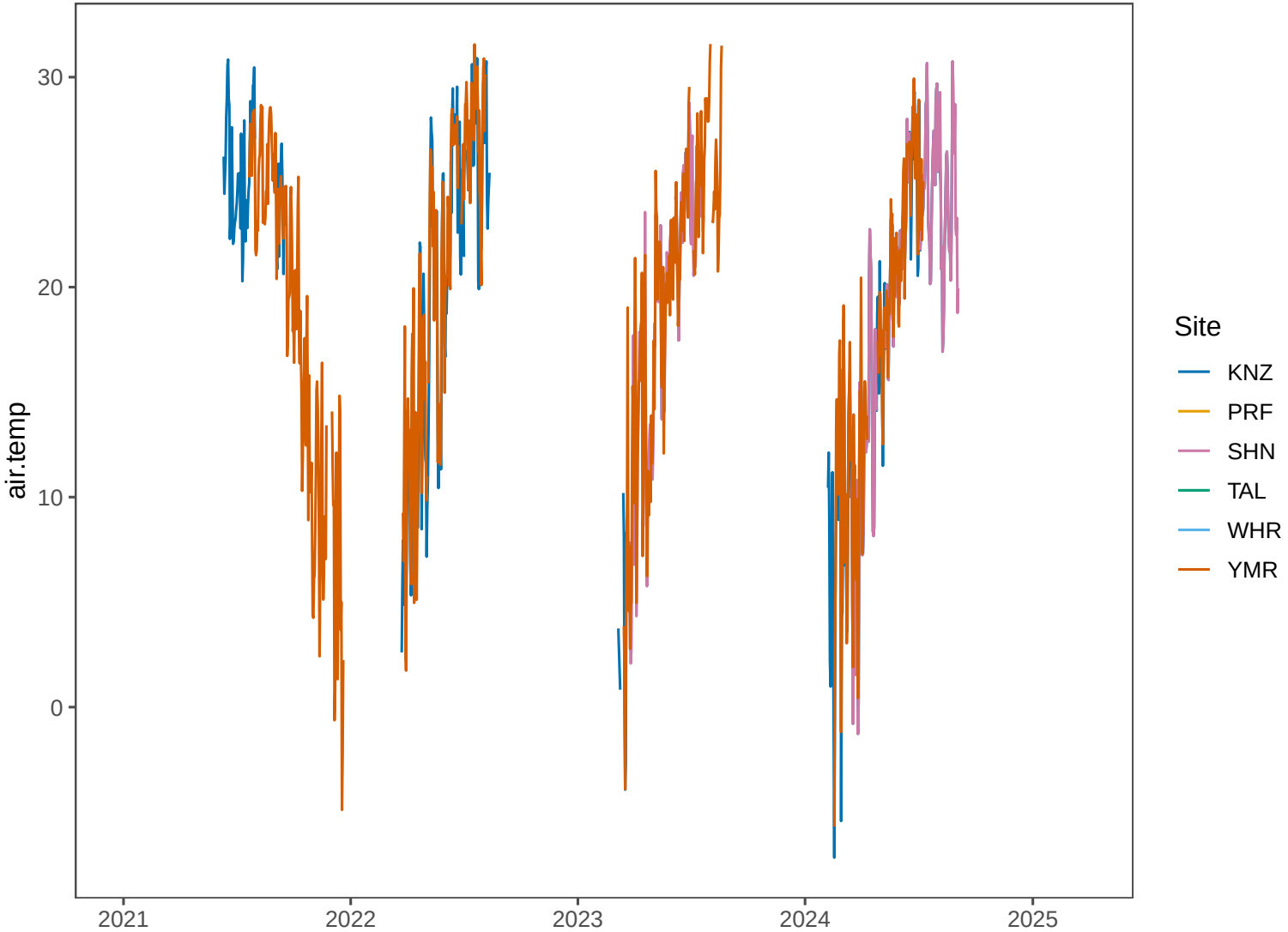
air.temp
30
20
10
0
2021
2022
2023
2024
2025
Site
KNZ
PRF
SHN
TAL
WHR
YMR

minDO.pctsat
100
75
50
25
0
2021
2022
2023
2024
2025
Site
KNZ
PRF
SHN
TAL
WHR
YMR

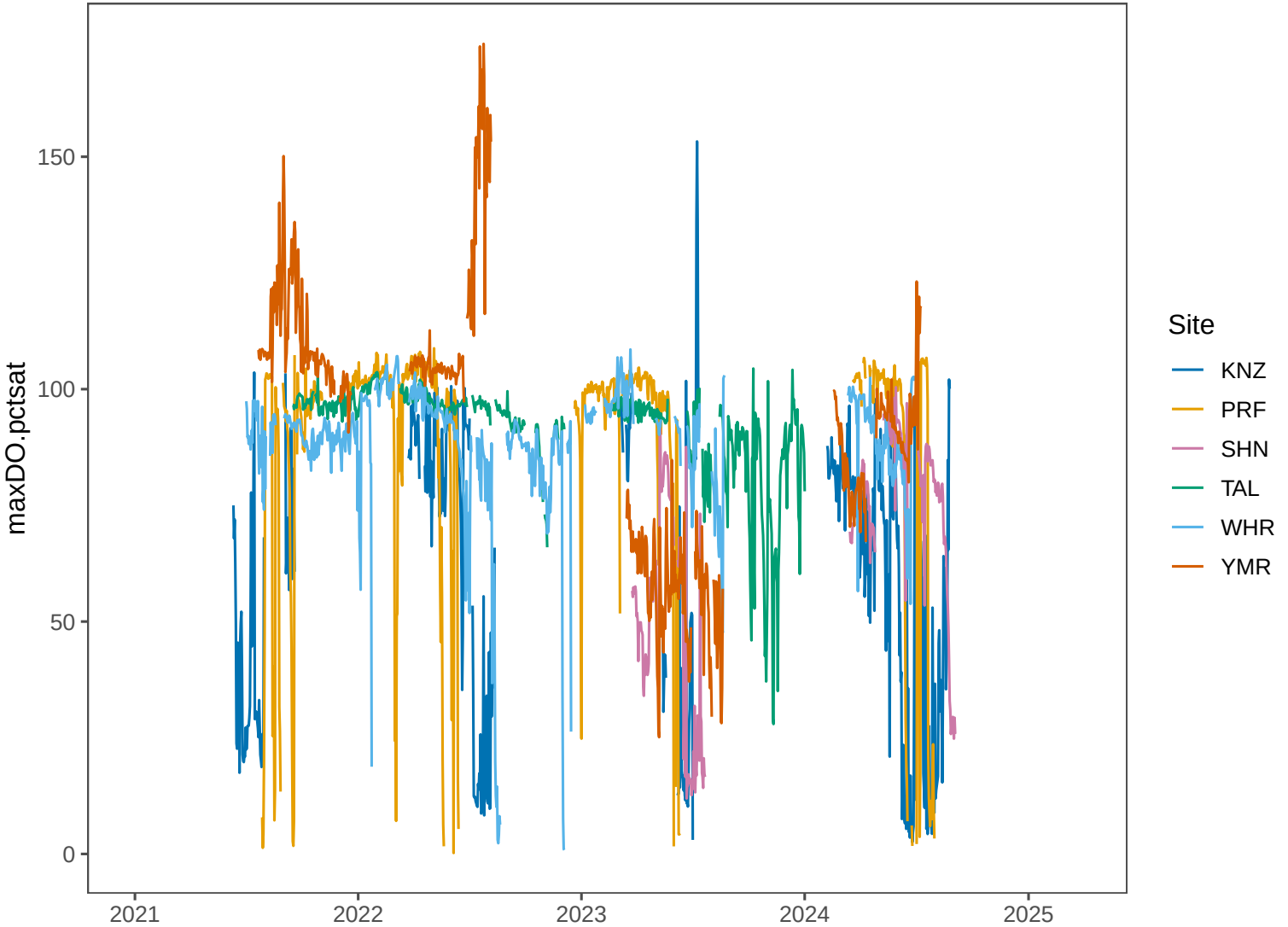
maxDO.pctsat
150
100
50
0
2021
2022
2023
2024
2025
Site
KNZ
PRF
SHN
TAL
WHR
YMR

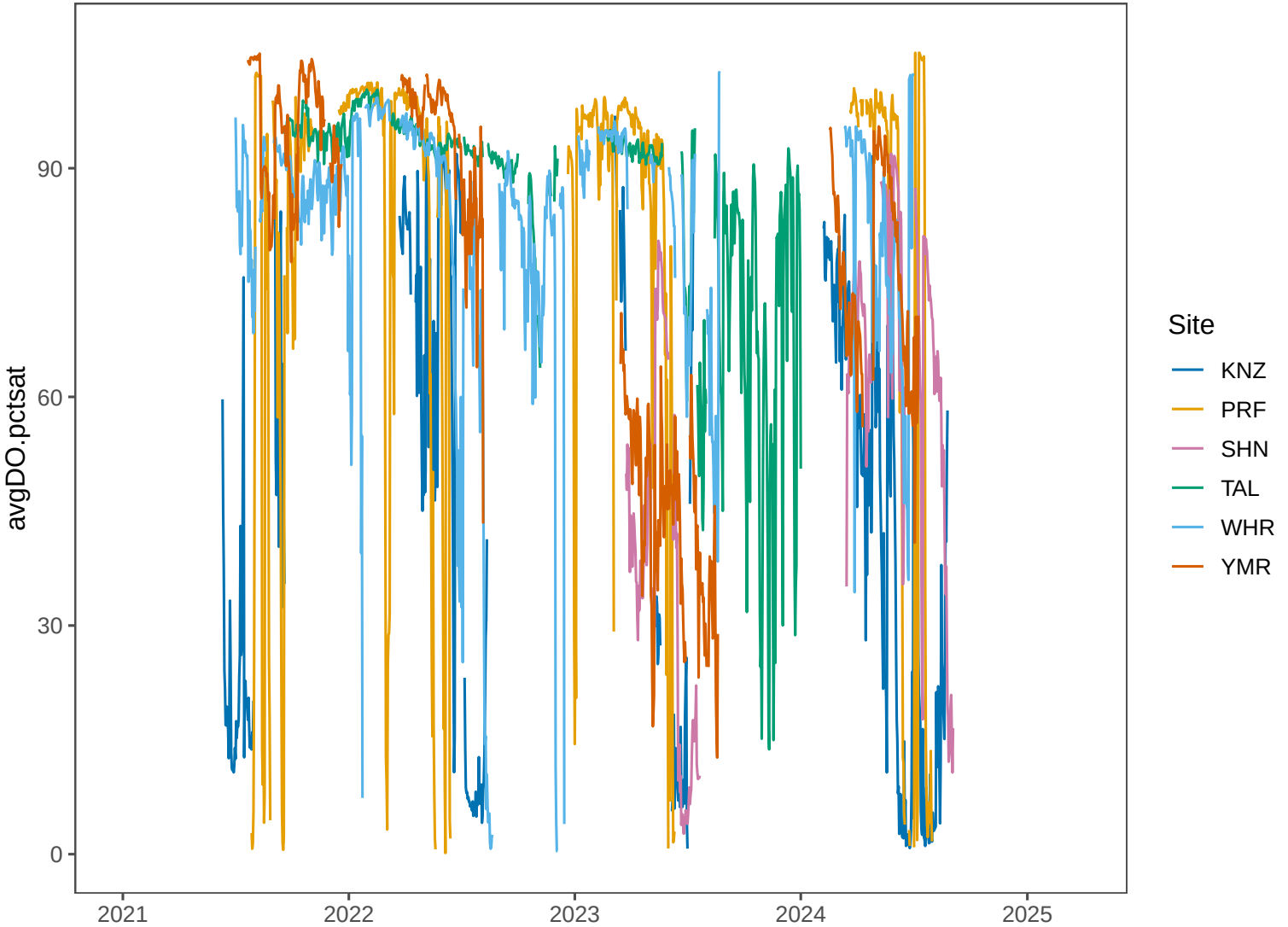
avgDO.pctsat
90
60
30
0
2021
2022
2023
2024
2025
Site
KNZ
PRF
SHN
TAL
WHR
YMR

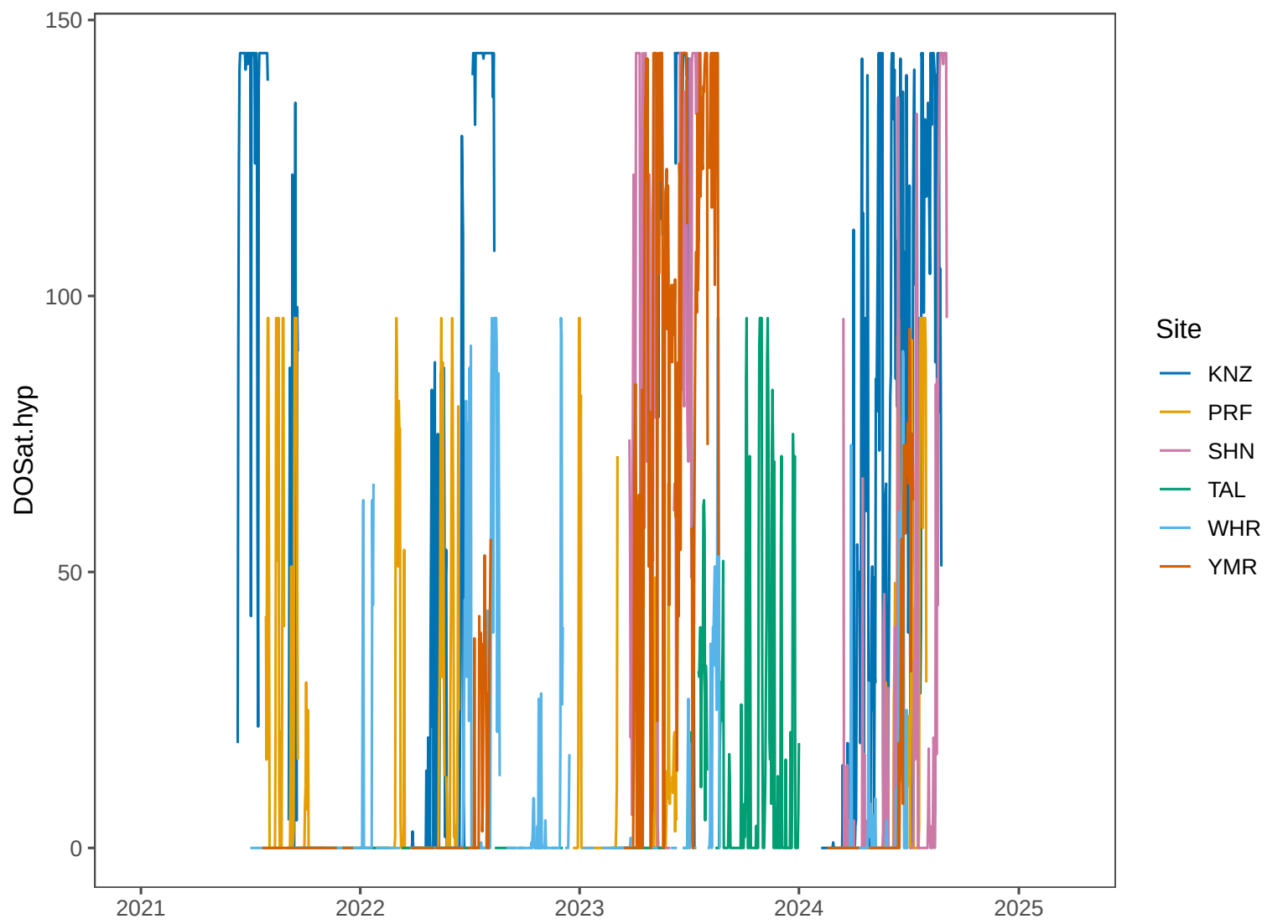
150
100
50
0
DOSat.hyp
2021
2022
2023
2024
2025
Site
KNZ
PRF
SHN
TAL
WHR
YMR

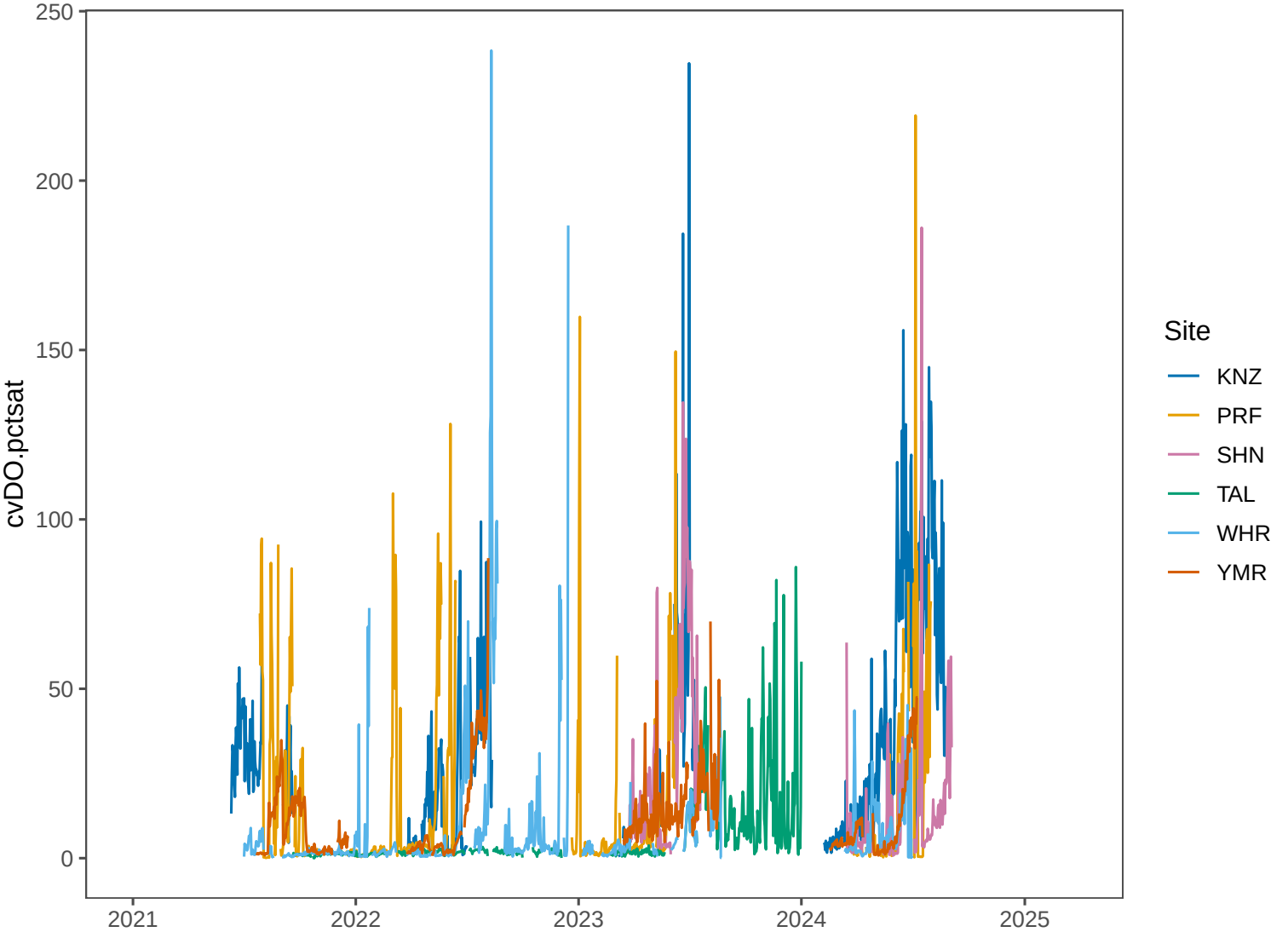
250
200
150
100
50
0
cvDO.pctsat
2021
2022
2023
2024
2025
Site
KNZ
PRF
SHN
TAL
WHR
YMR

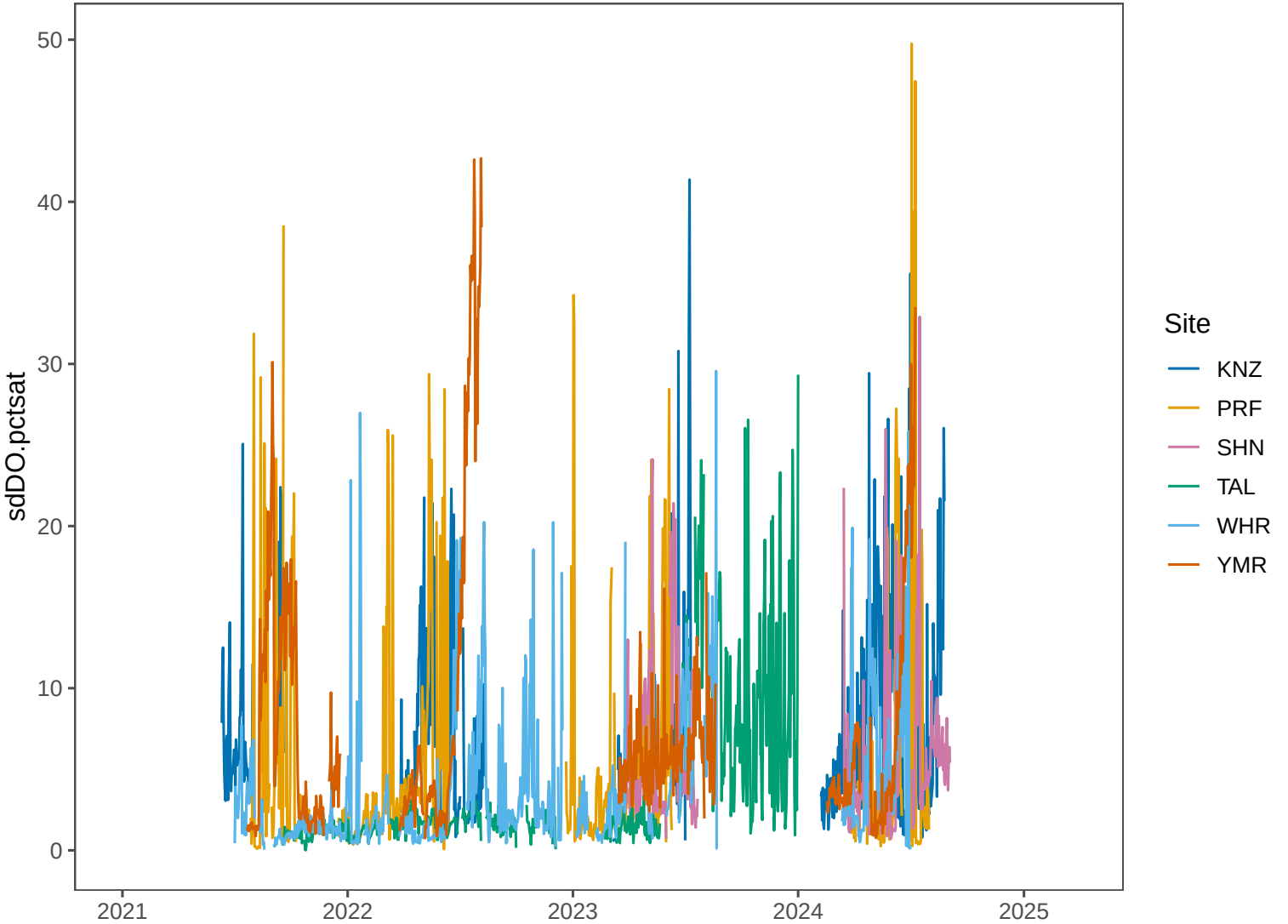
sdDO.pctsat
50
40
30
20
10
0
2021
2022
2023
2024
2025
Site
KNZ
PRF
SHN
TAL
WHR
YMR

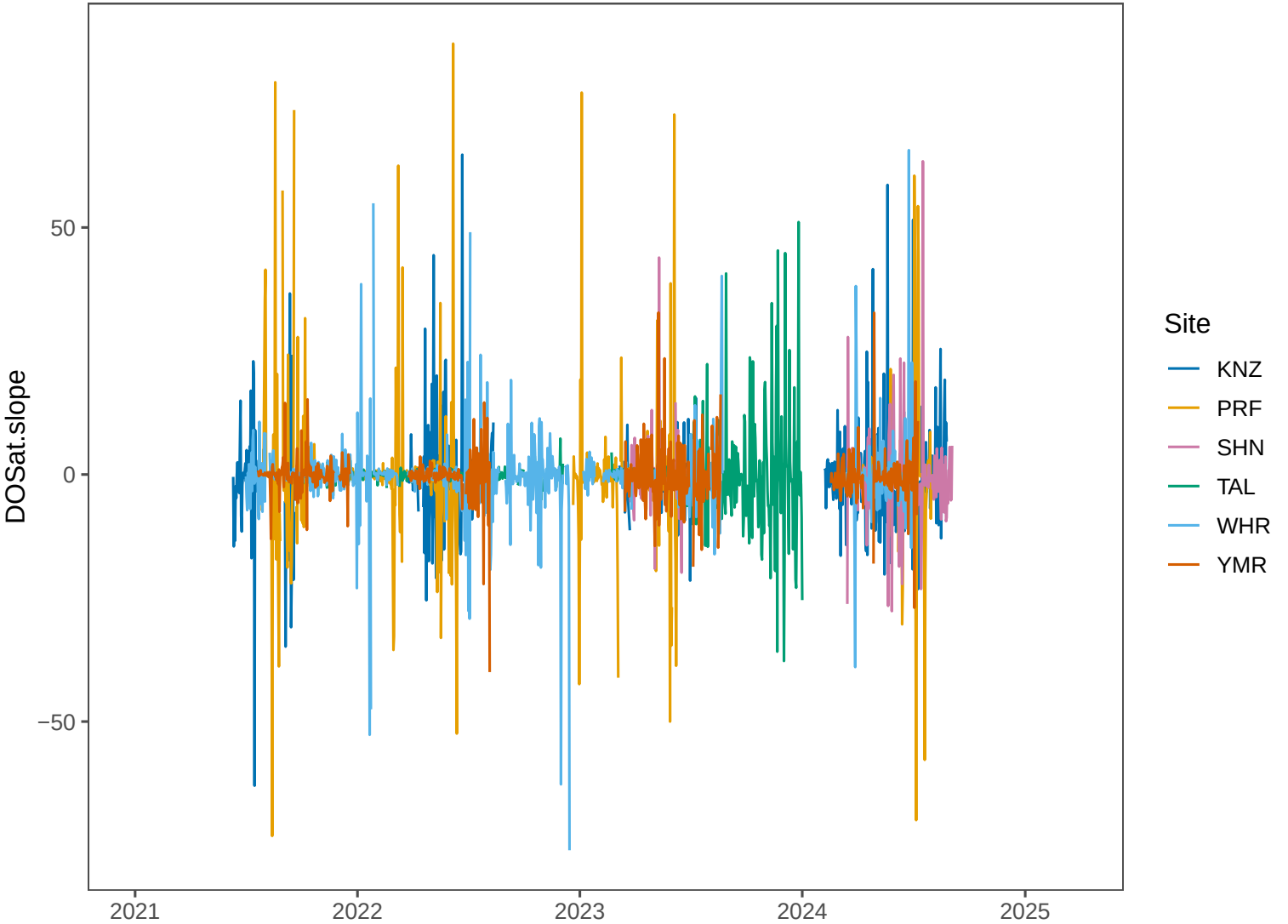
DOSat.slope
50
0
−50
2021
2022
2023
2024
2025
Site
KNZ
PRF
SHN
TAL
WHR
YMR

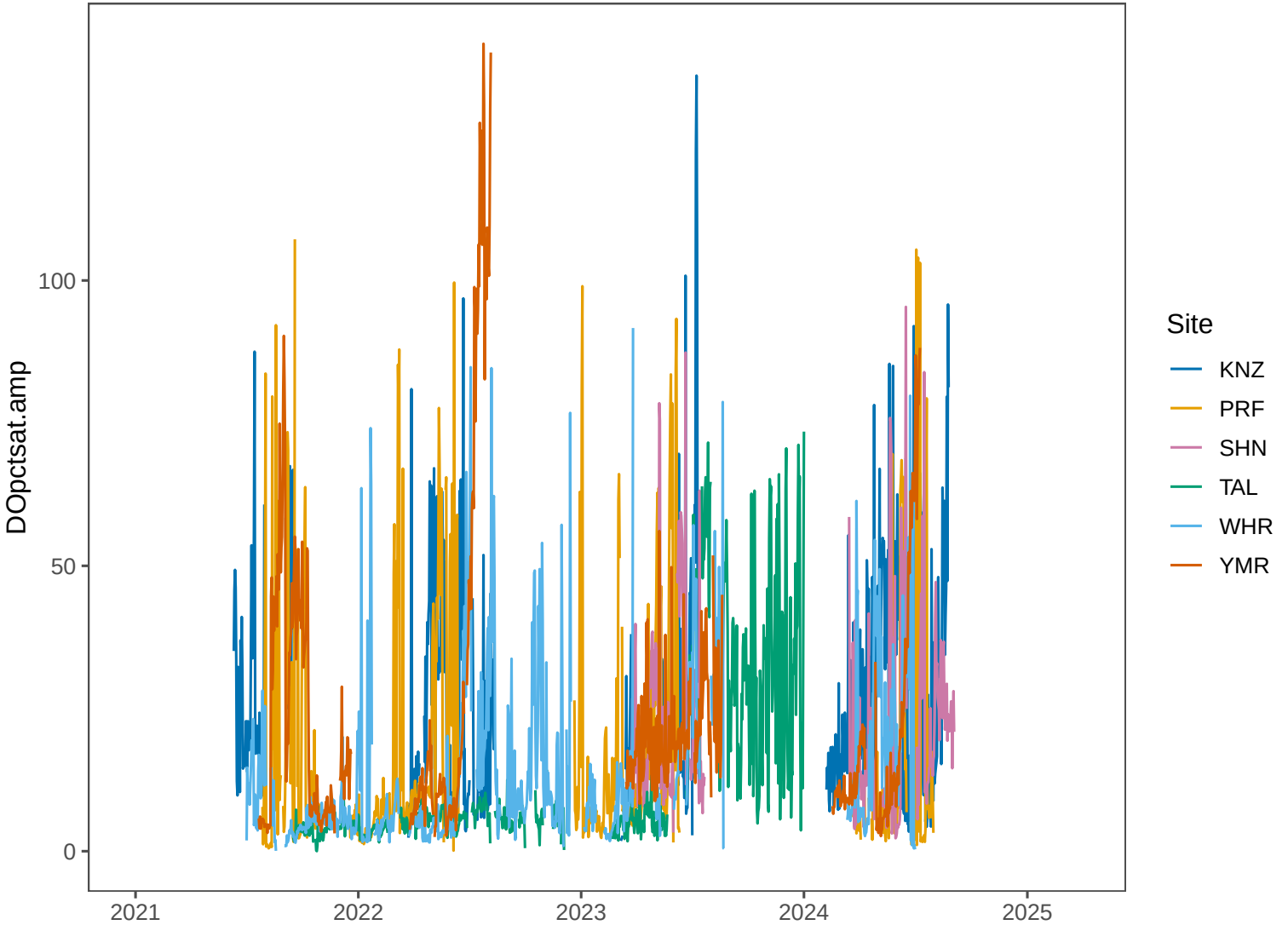
DOpctsat.amp
100
50
0
2021
2022
2023
2024
2025
Site
KNZ
PRF
SHN
TAL
WHR
YMR

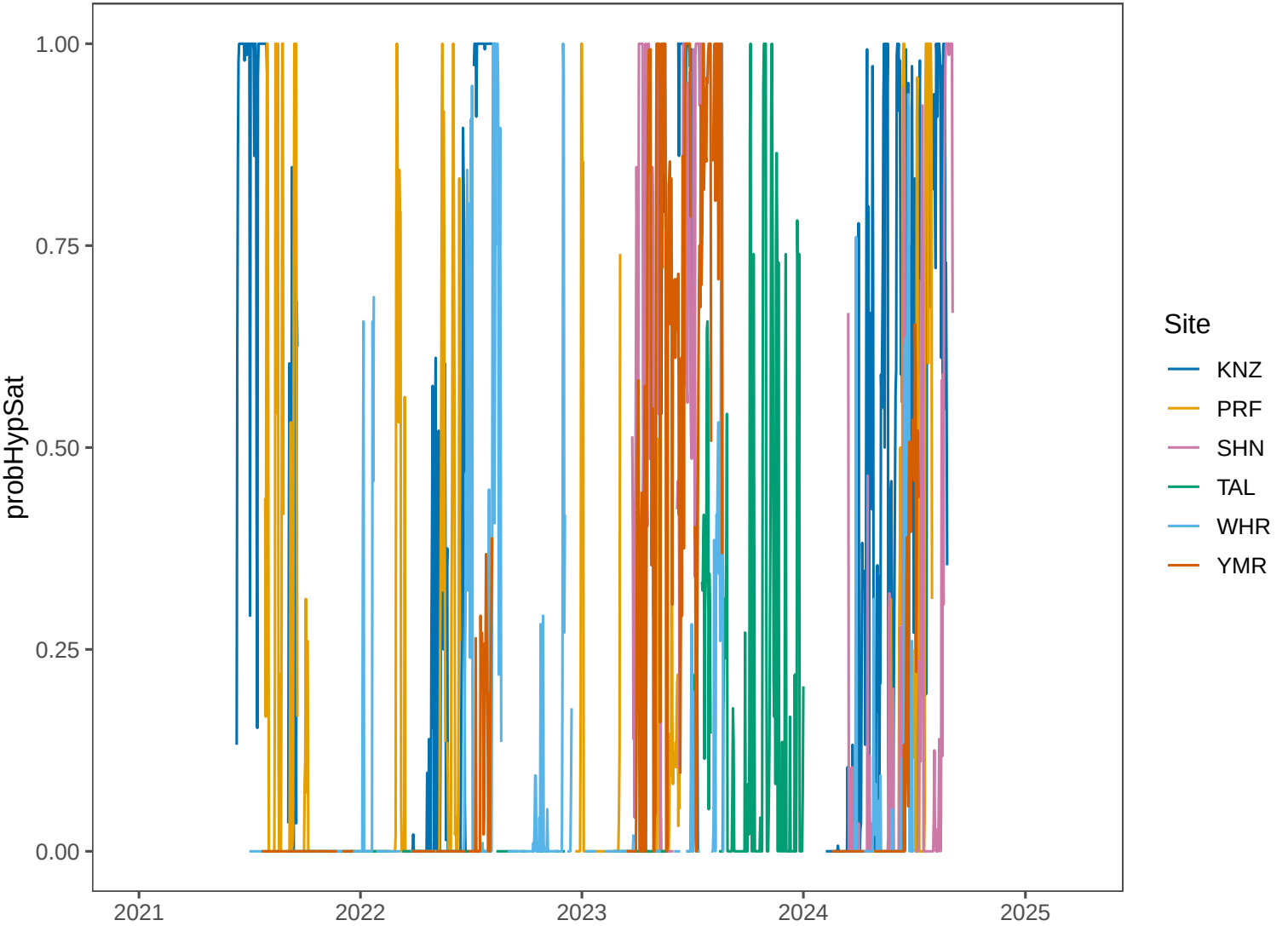
1.00
0.75
0.50
0.25
0.00
probHypSat
2021
2022
2023
2024
2025
Site
KNZ
PRF
SHN
TAL
WHR
YMR

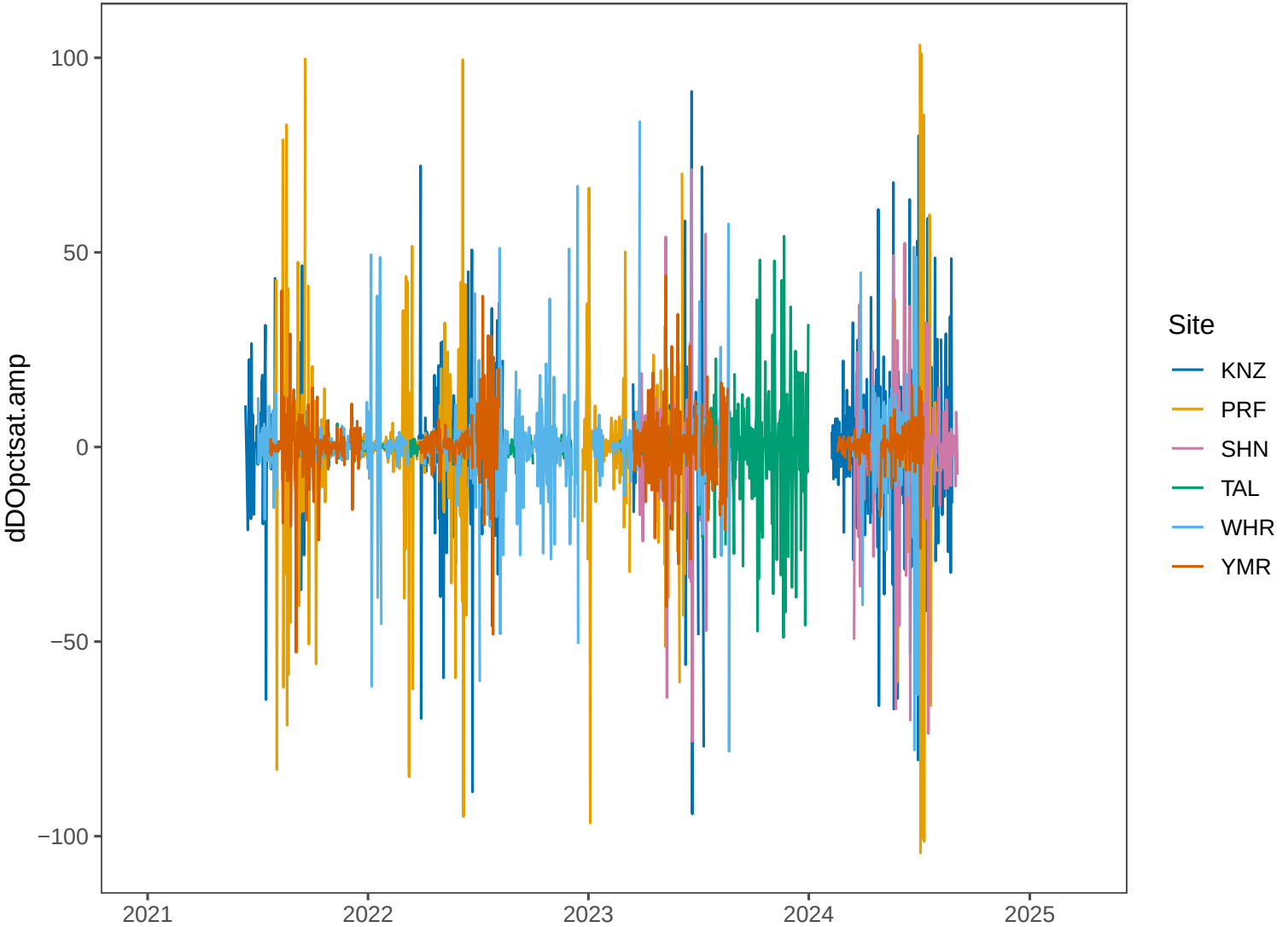
dDOpctsat.amp
100
50
0
−50
−100
2021
2022
2023
2024
2025
Site
KNZ
PRF
SHN
TAL
WHR
YMR

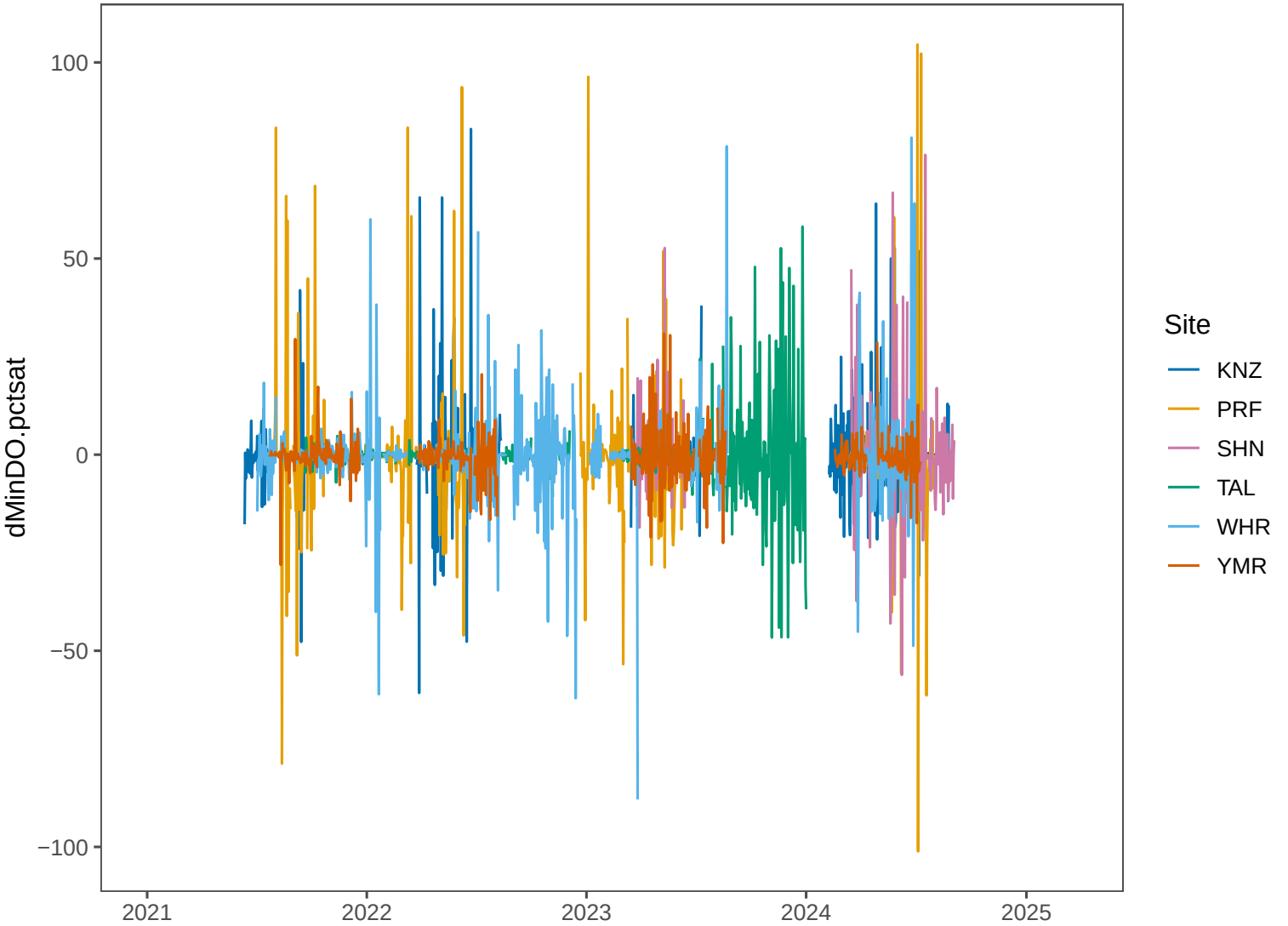
dMinDO.pctsat
100
50
0
−50
−100
2021
2022
2023
2024
2025
Site
KNZ
PRF
SHN
TAL
WHR
YMR

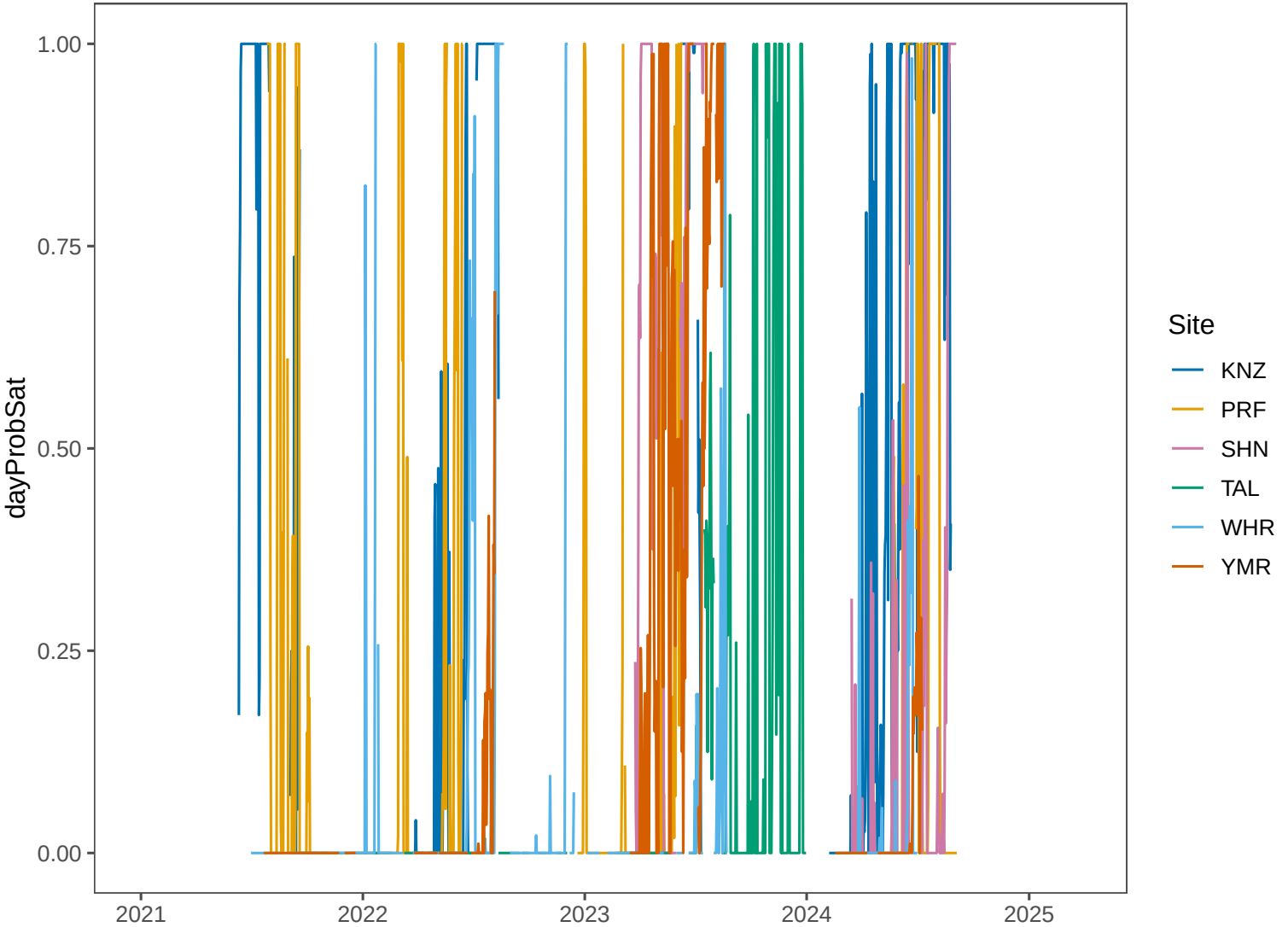
1.00
0.75
0.50
0.25
0.00
dayProbSat
2021
2022
2023
2024
2025
Site
KNZ
PRF
SHN
TAL
WHR
YMR

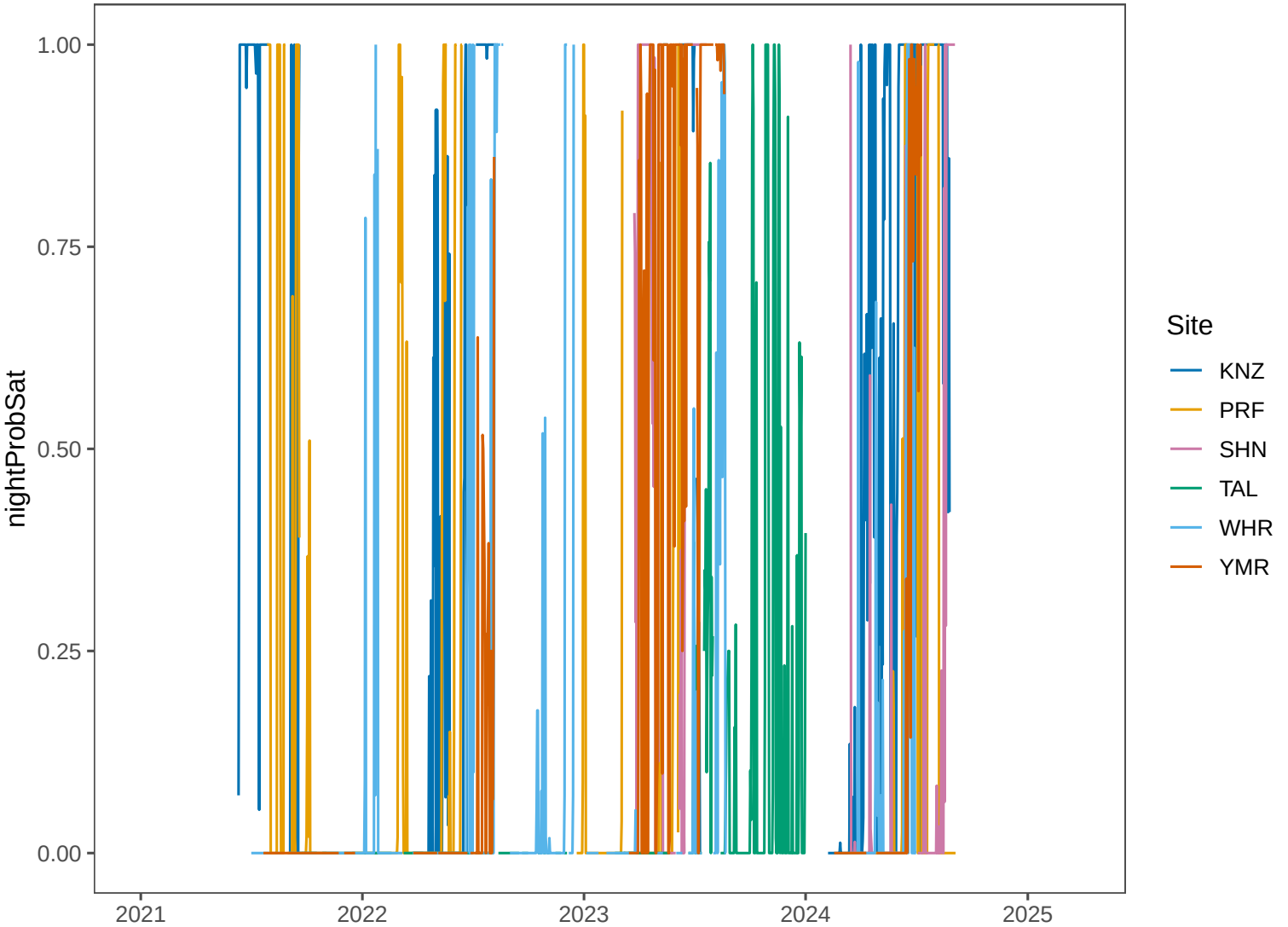
1.00
0.75
0.50
0.25
0.00
nightProbSat
2021
2022
2023
2024
2025
Site
KNZ
PRF
SHN
TAL
WHR
YMR

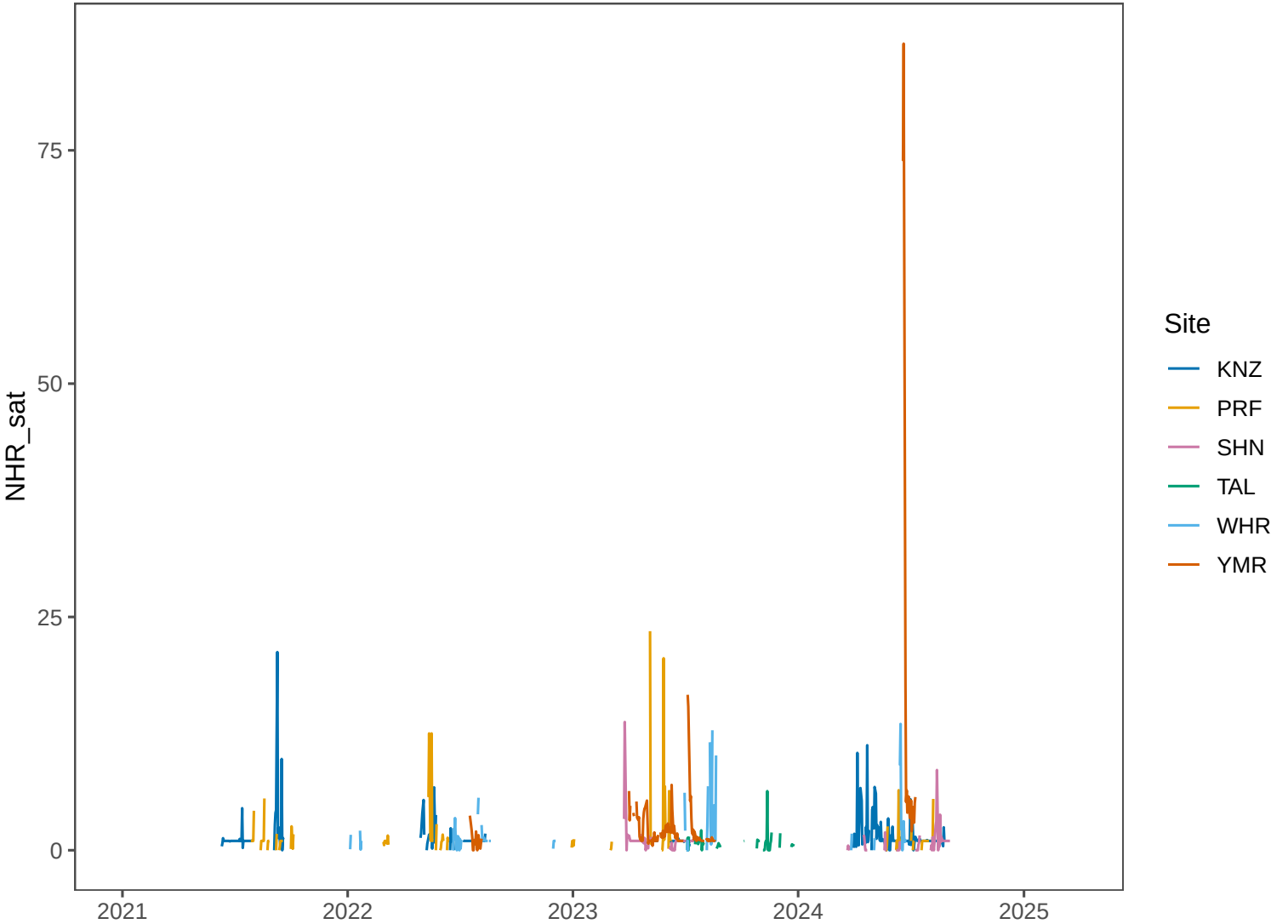
NHR_sat
75
50
25
0
2021
2022
2023
2024
2025
Site
KNZ
PRF
SHN
TAL
WHR
YMR

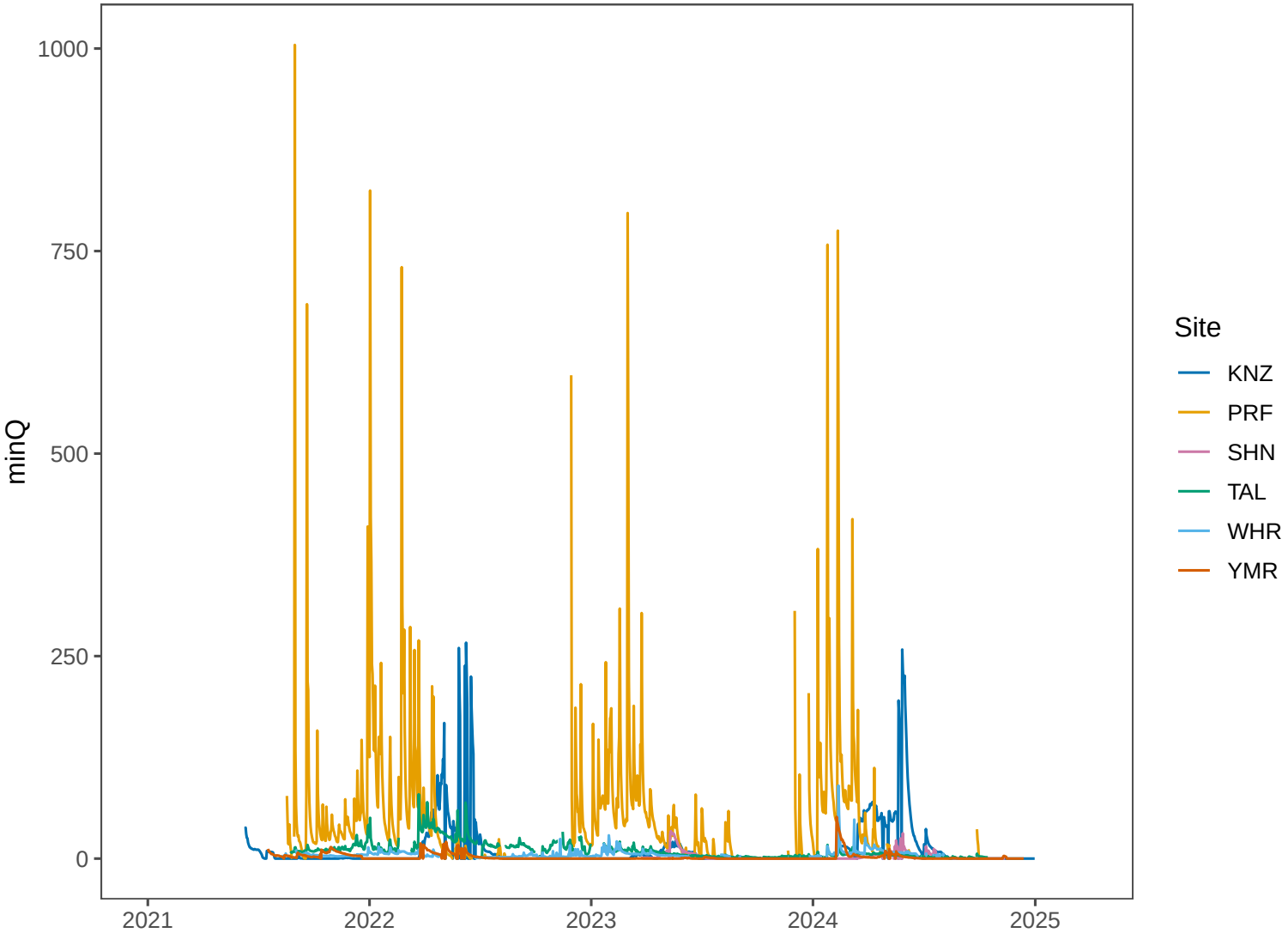
minQ
1000
750
500
250
0
2021
2022
2023
2024
2025
Site
KNZ
PRF
SHN
TAL
WHR
YMR

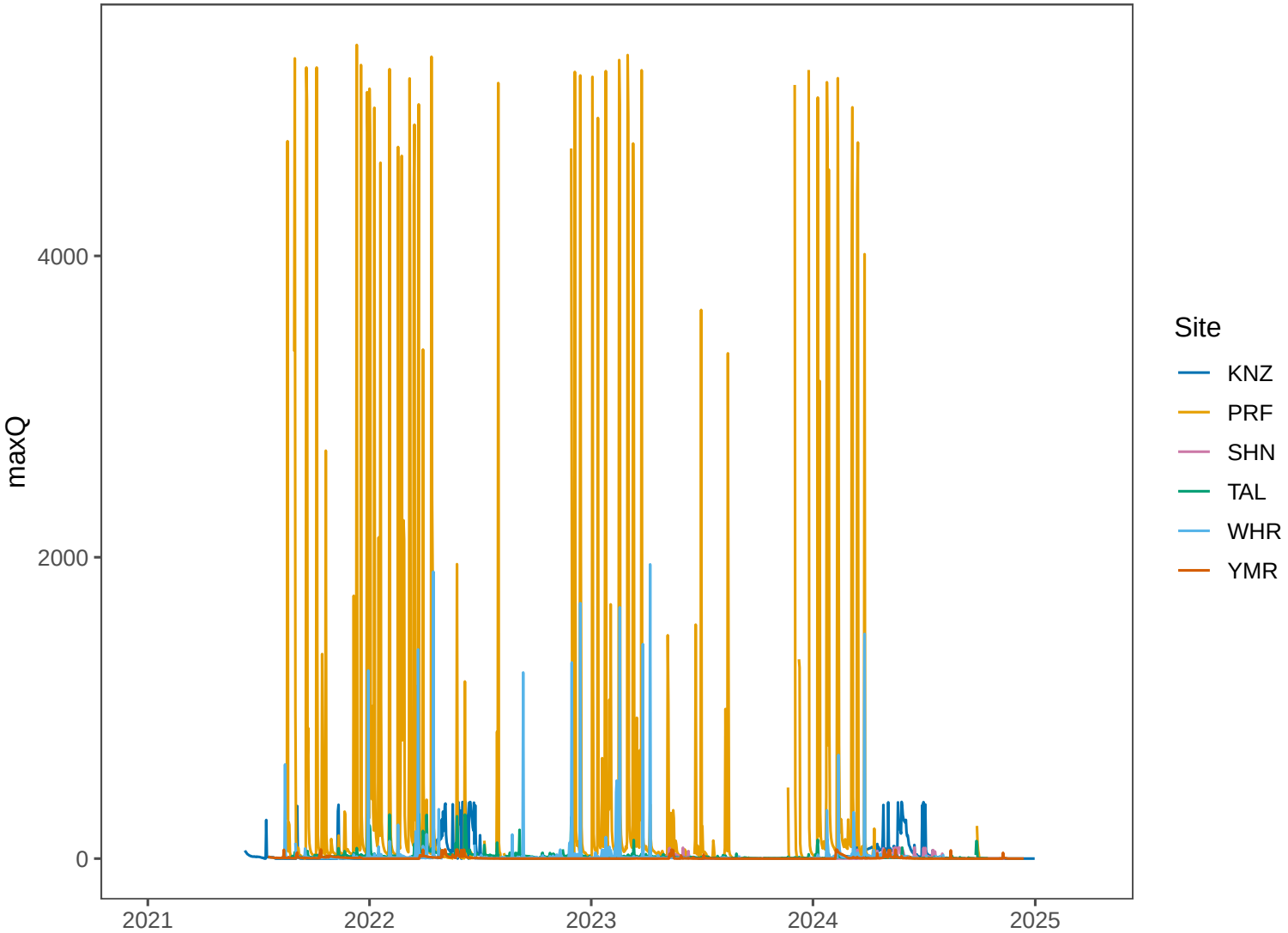
maxQ
4000
2000
0
2021
2022
2023
2024
2025
Site
KNZ
PRF
SHN
TAL
WHR
YMR

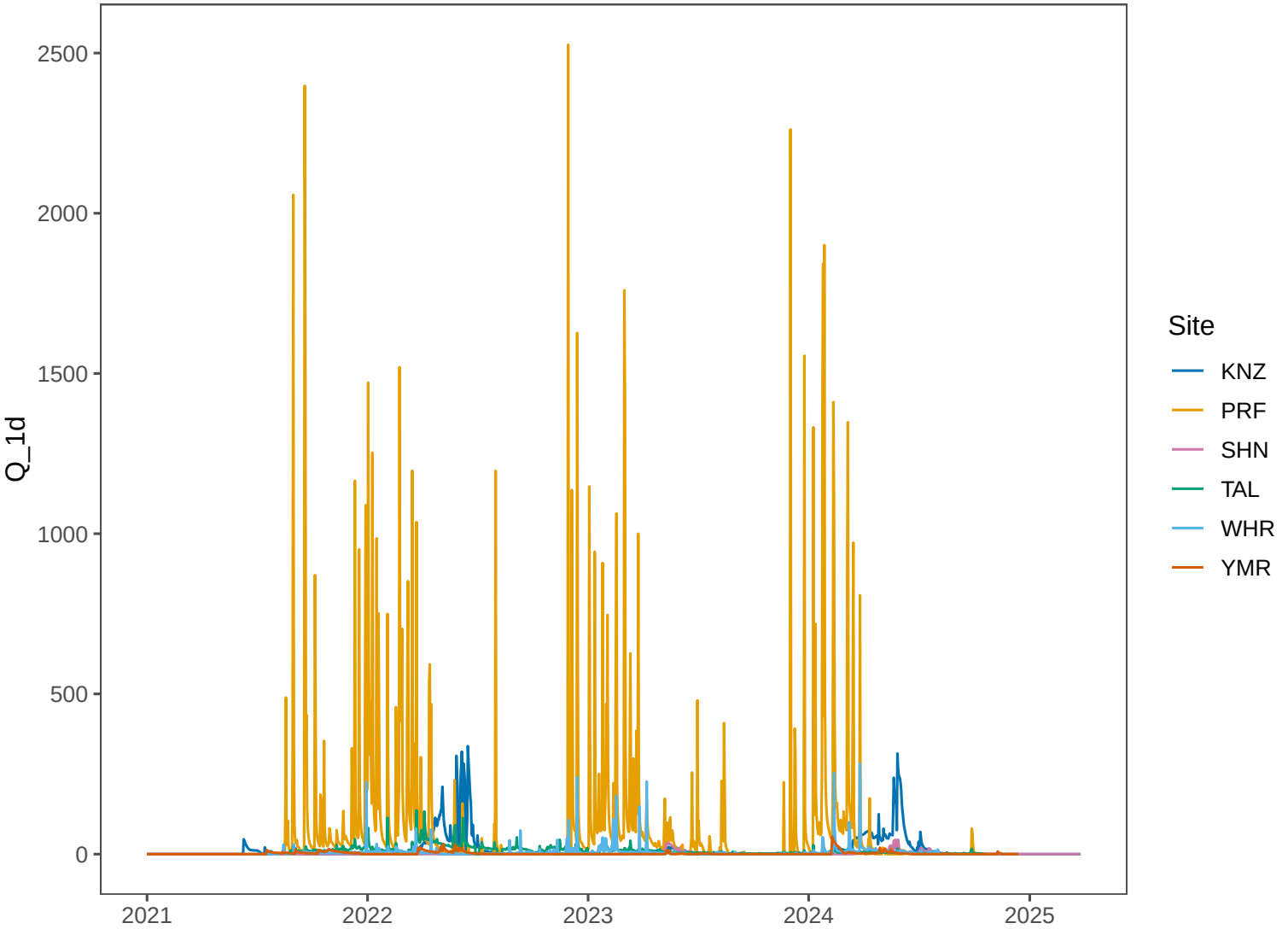
Q_1d
2500
2000
1500
1000
500
0
2021
2022
2023
2024
2025
Site
KNZ
PRF
SHN
TAL
WHR
YMR

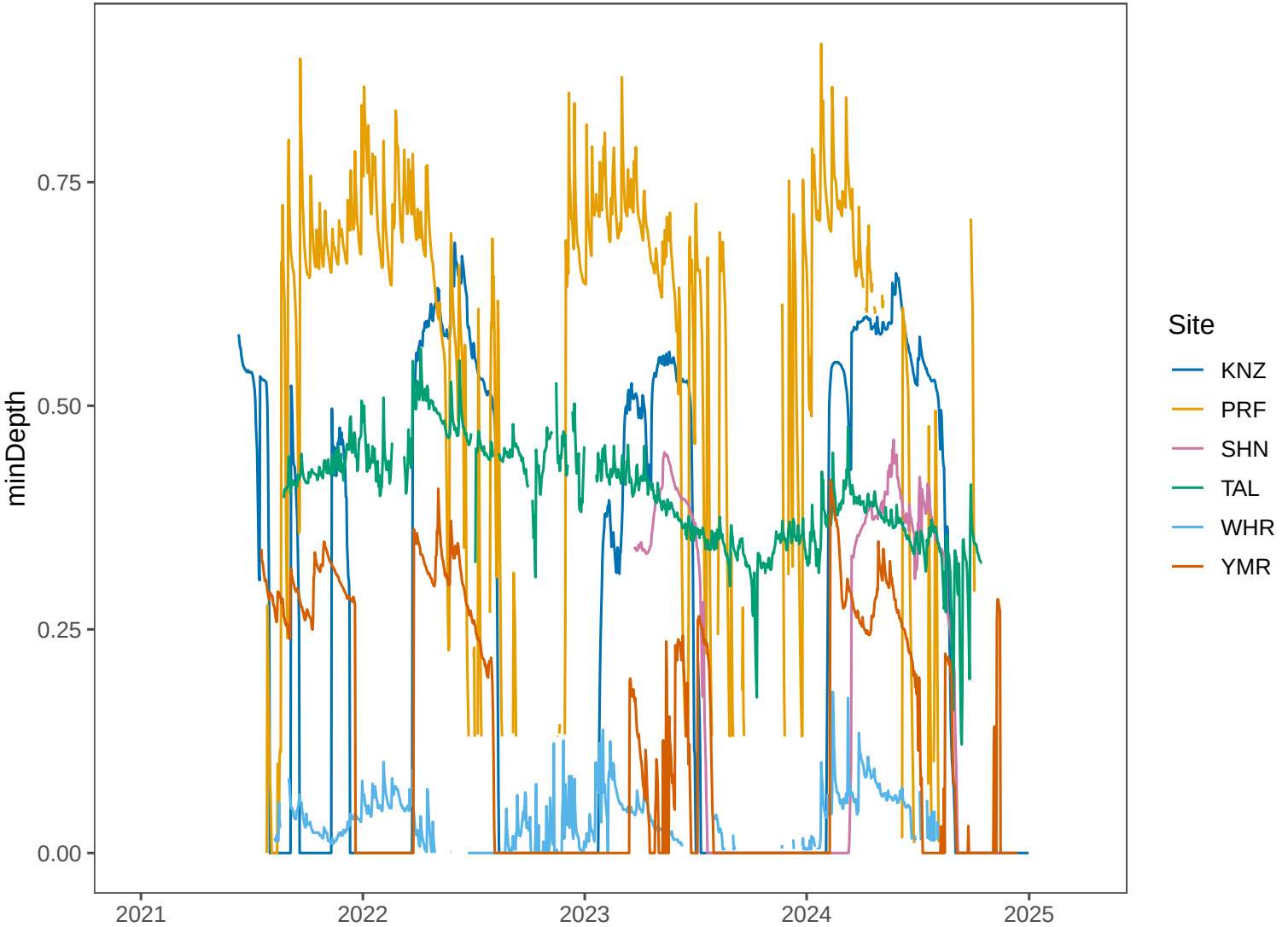
minDepth
0.75
0.50
0.25
0.00
2021
2022
2023
2024
2025
Site
KNZ
PRF
SHN
TAL
WHR
YMR

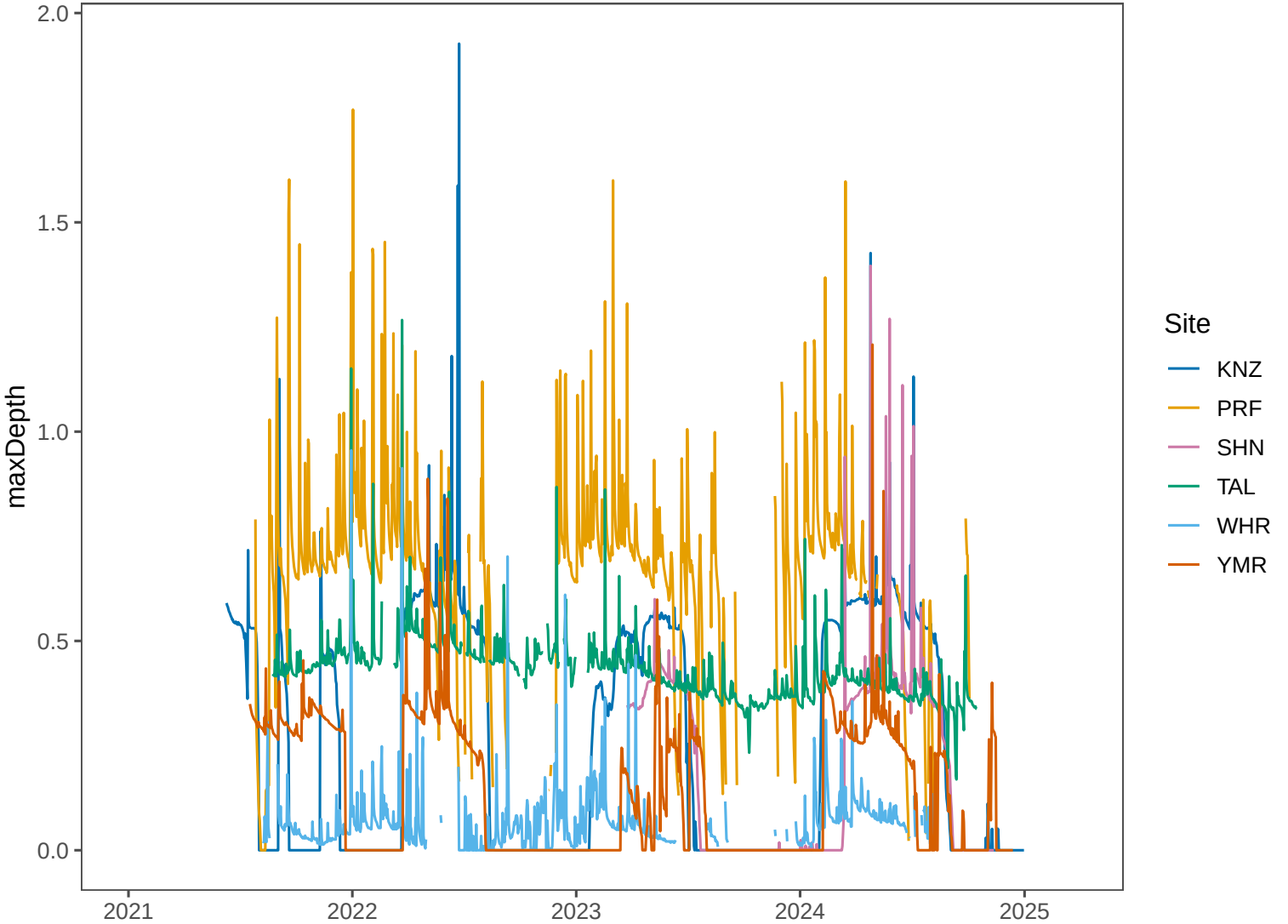
maxDepth
2.0
1.5
1.0
0.5
0.0
2021
2022
2023
2024
2025
Site
KNZ
PRF
SHN
TAL
WHR
YMR

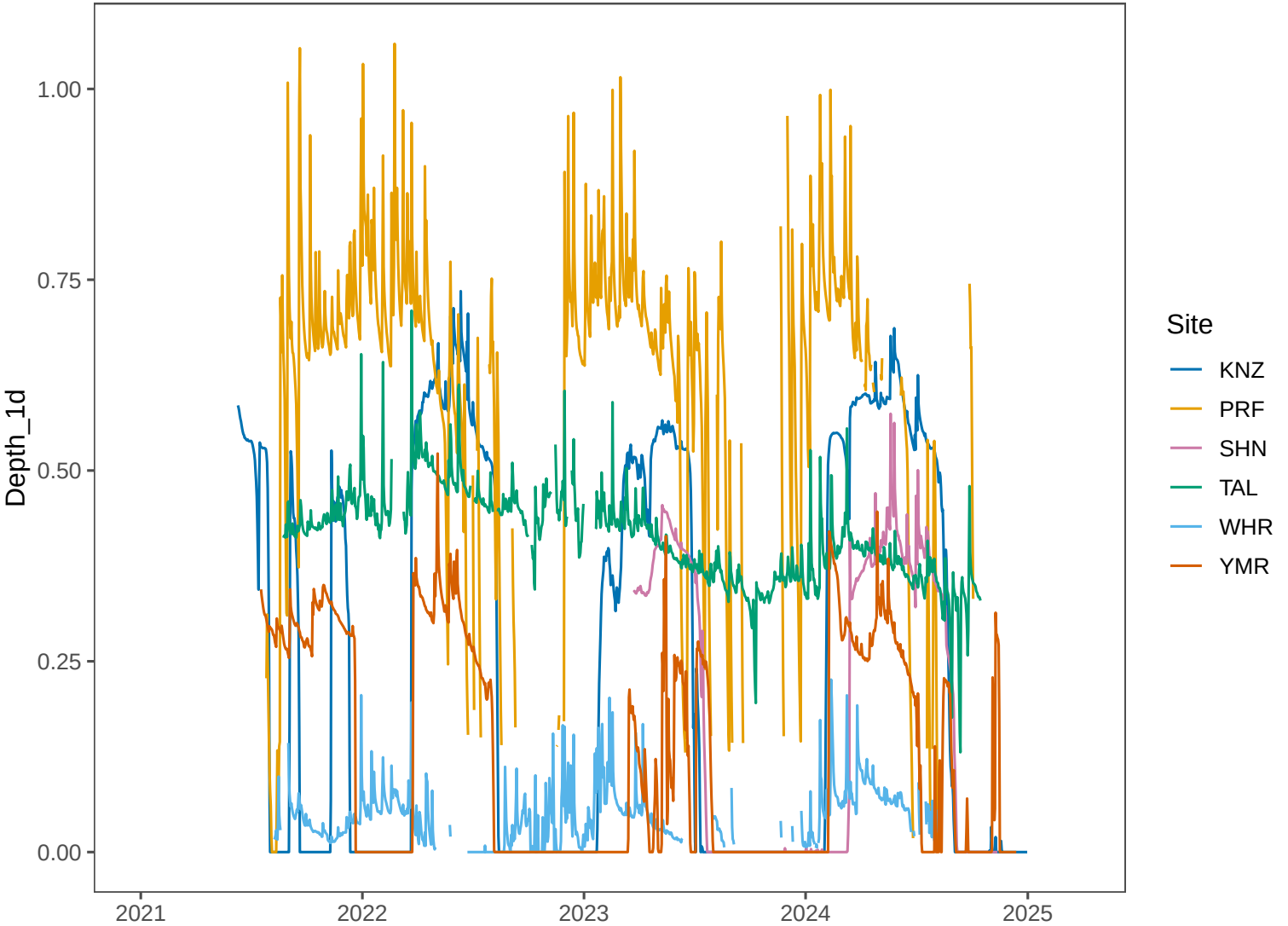
Depth_1d
1.00
0.75
0.50
0.25
0.00
2021
2022
2023
2024
2025
Site
KNZ
PRF
SHN
TAL
WHR
YMR

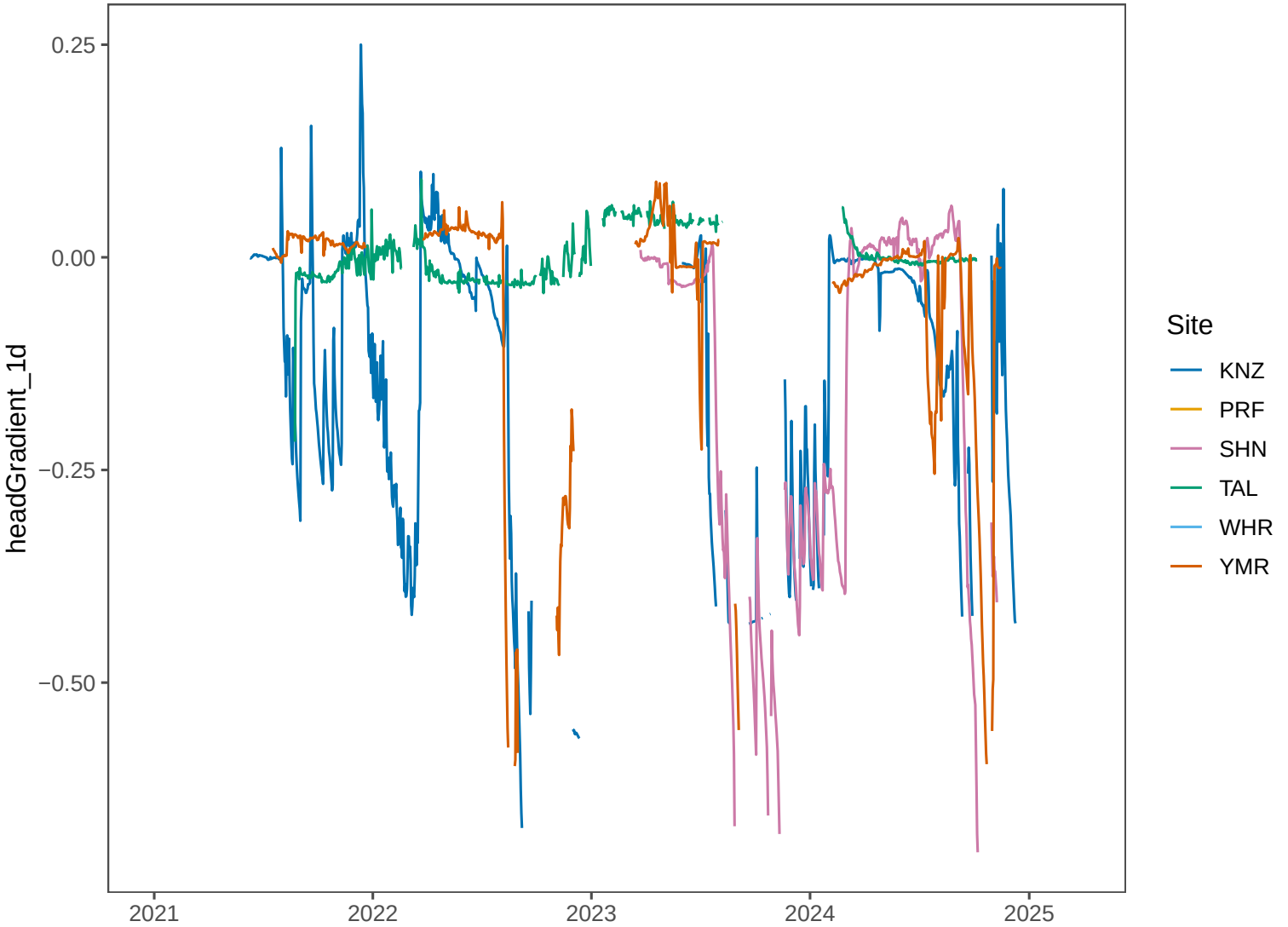
0.25
0.00
−0.25
−0.50
headGradient_1d
2021
2022
2023
2024
2025
Site
KNZ
PRF
SHN
TAL
WHR
YMR

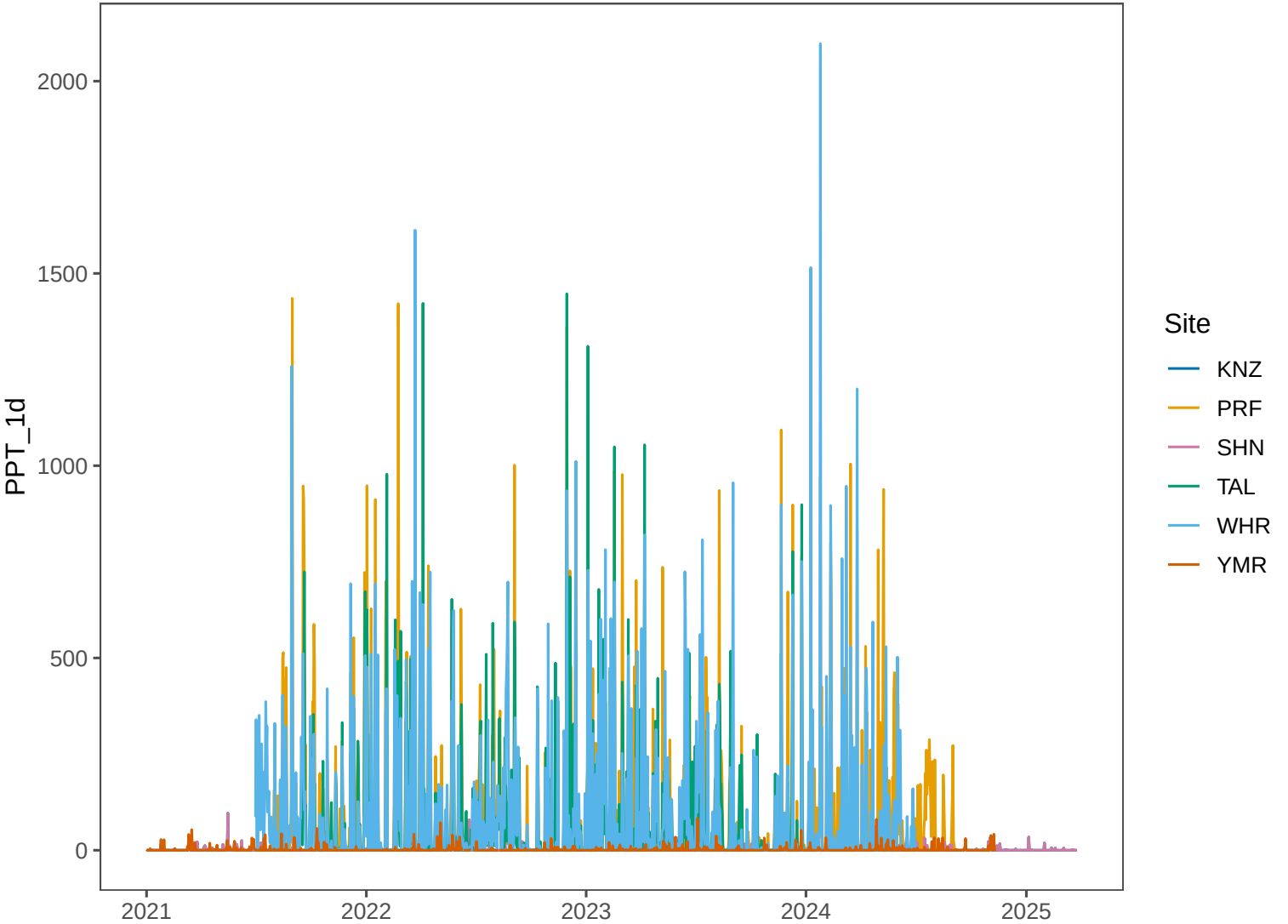
PPT_1d
2000
1500
1000
500
0
2021
2022
2023
2024
2025
Site
KNZ
PRF
SHN
TAL
WHR
YMR

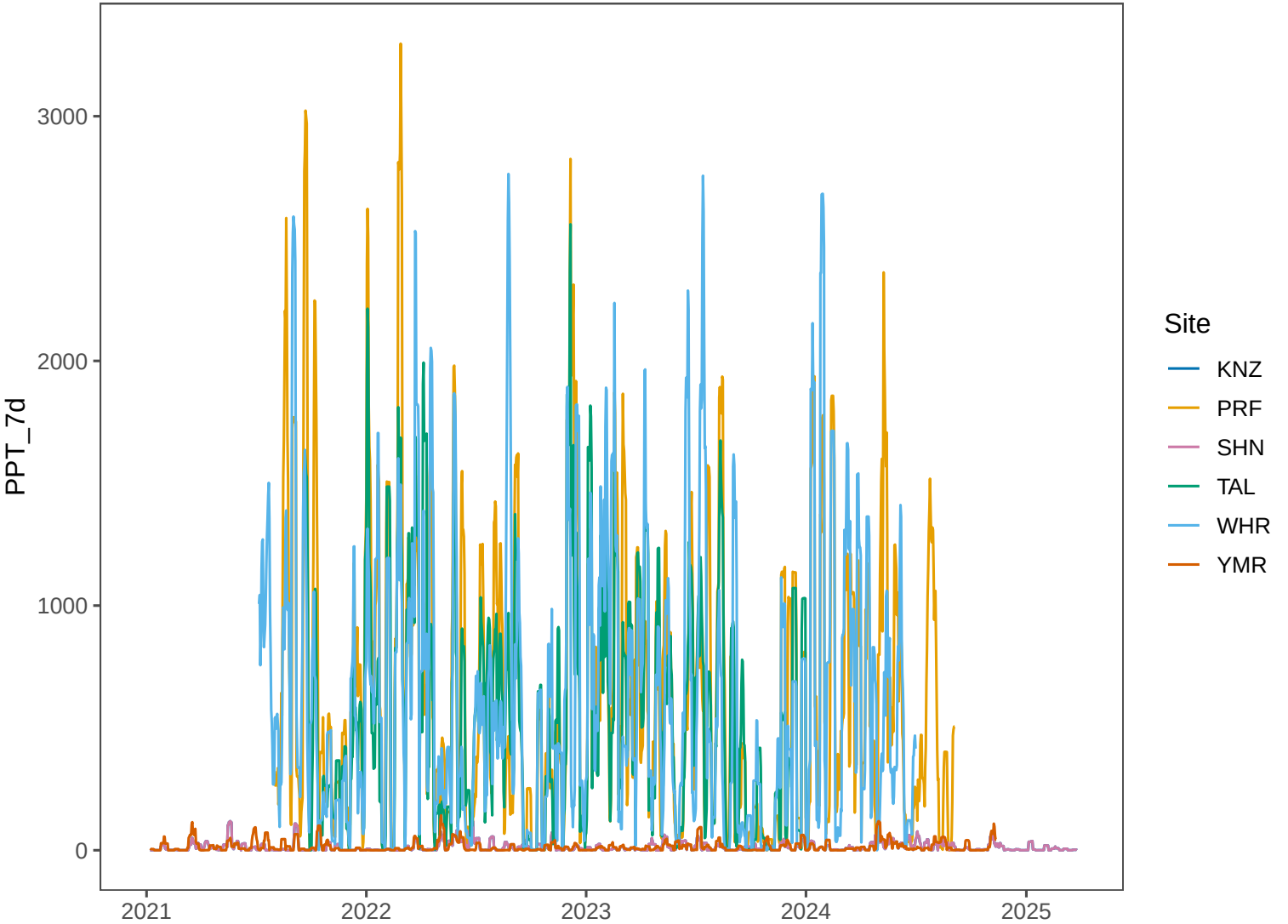
PPT_7d
3000
2000
1000
0
2021
2022
2023
2024
2025
Site
KNZ
PRF
SHN
TAL
WHR
YMR

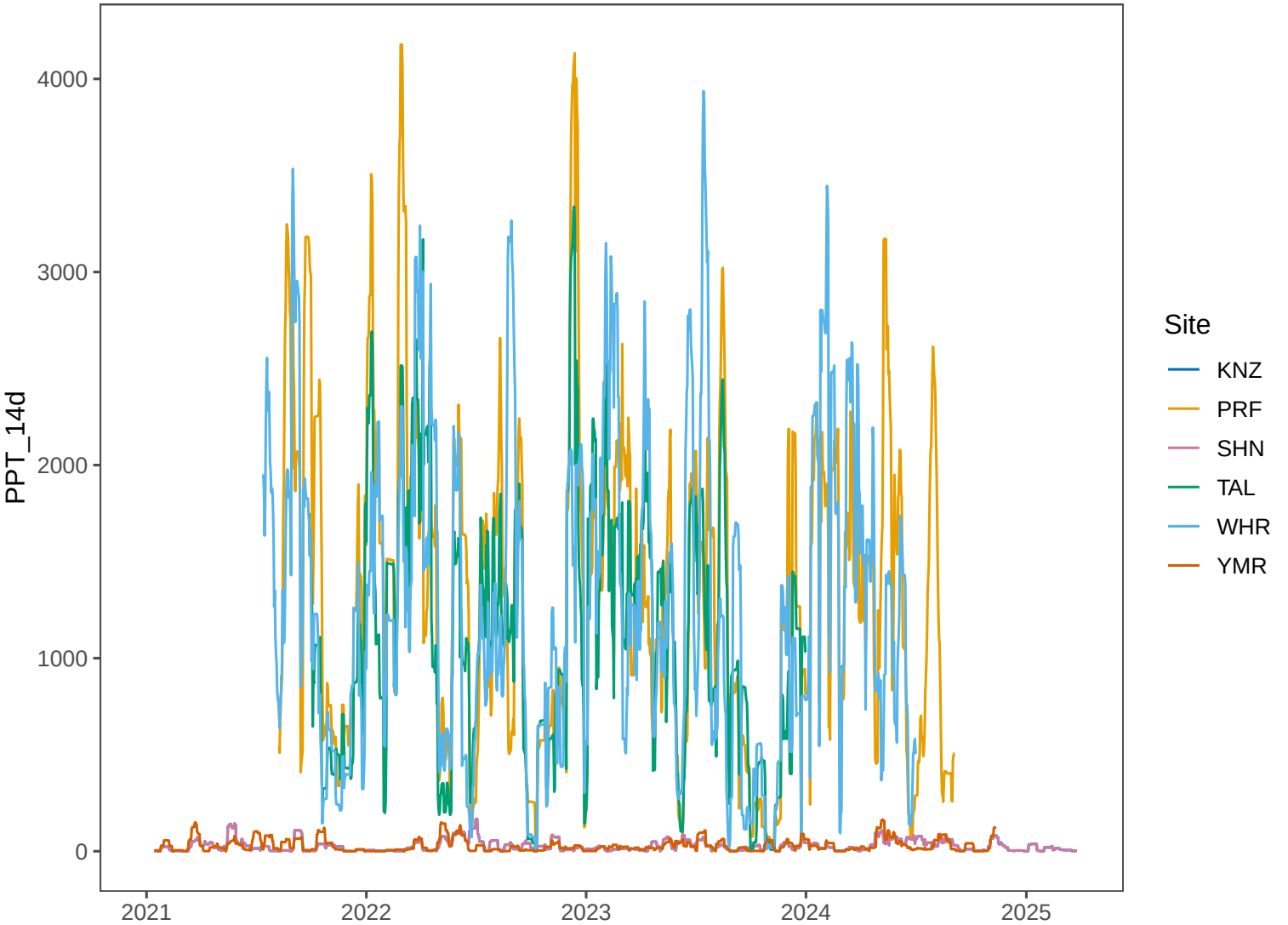
PPT_14d
4000
3000
2000
1000
0
2021
2022
2023
2024
2025
Site
KNZ
PRF
SHN
TAL
WHR
YMR

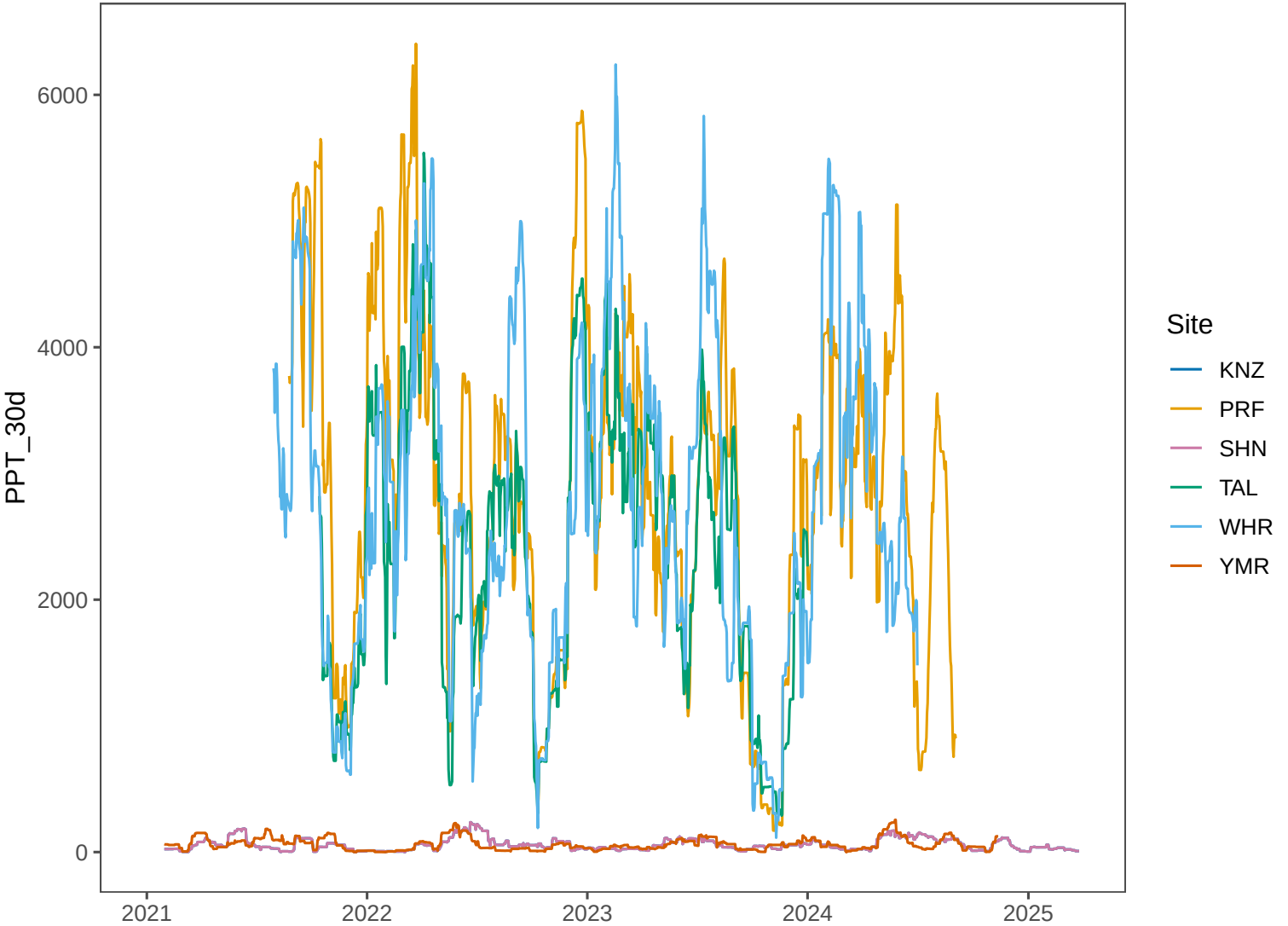
PPT_30d
6000
4000
2000
0
2021
2022
2023
2024
2025
Site
KNZ
PRF
SHN
TAL
WHR
YMR

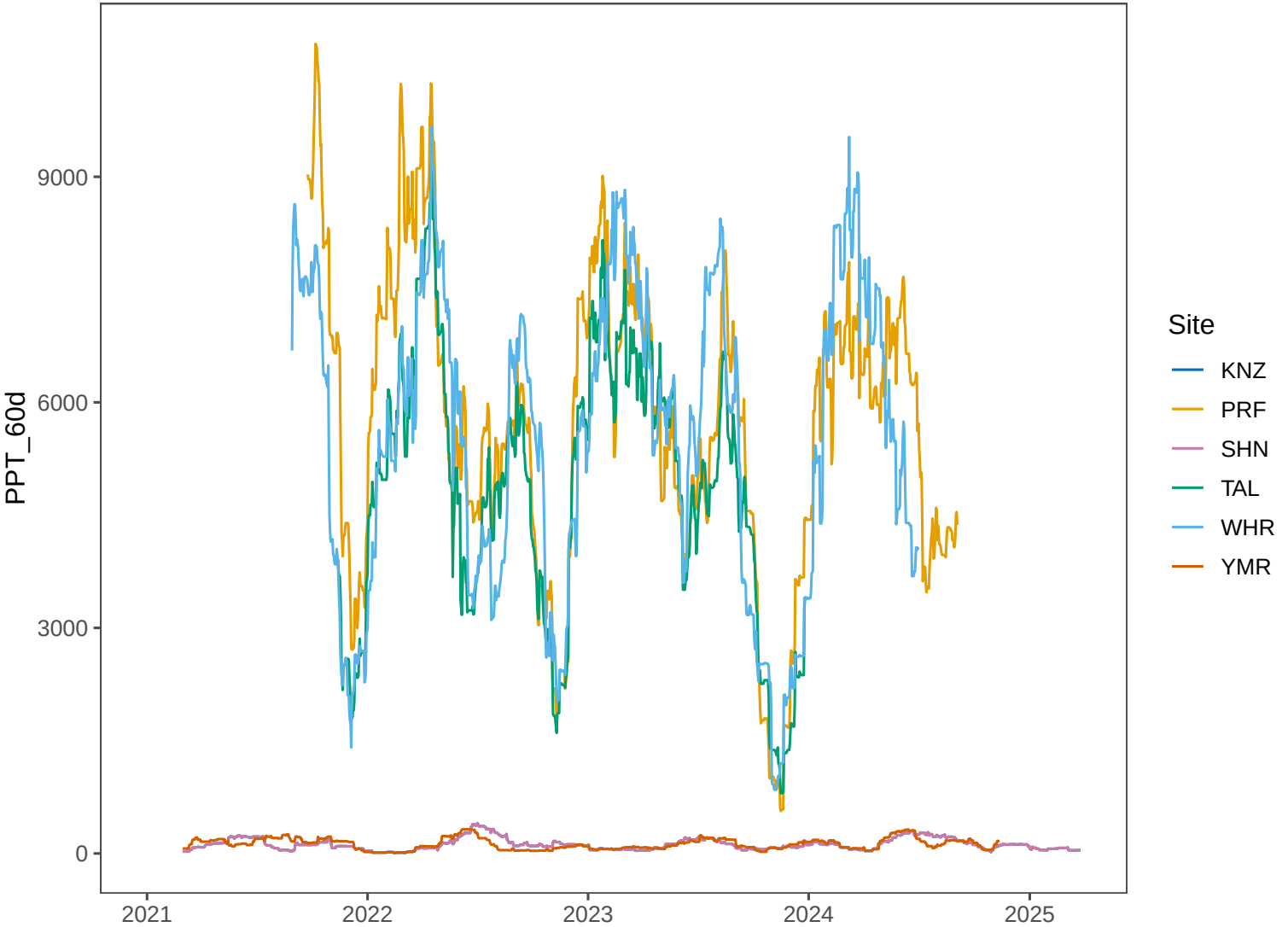
PPT_60d
9000
6000
3000
0
2021
2022
2023
2024
2025
Site
KNZ
PRF
SHN
TAL
WHR
YMR

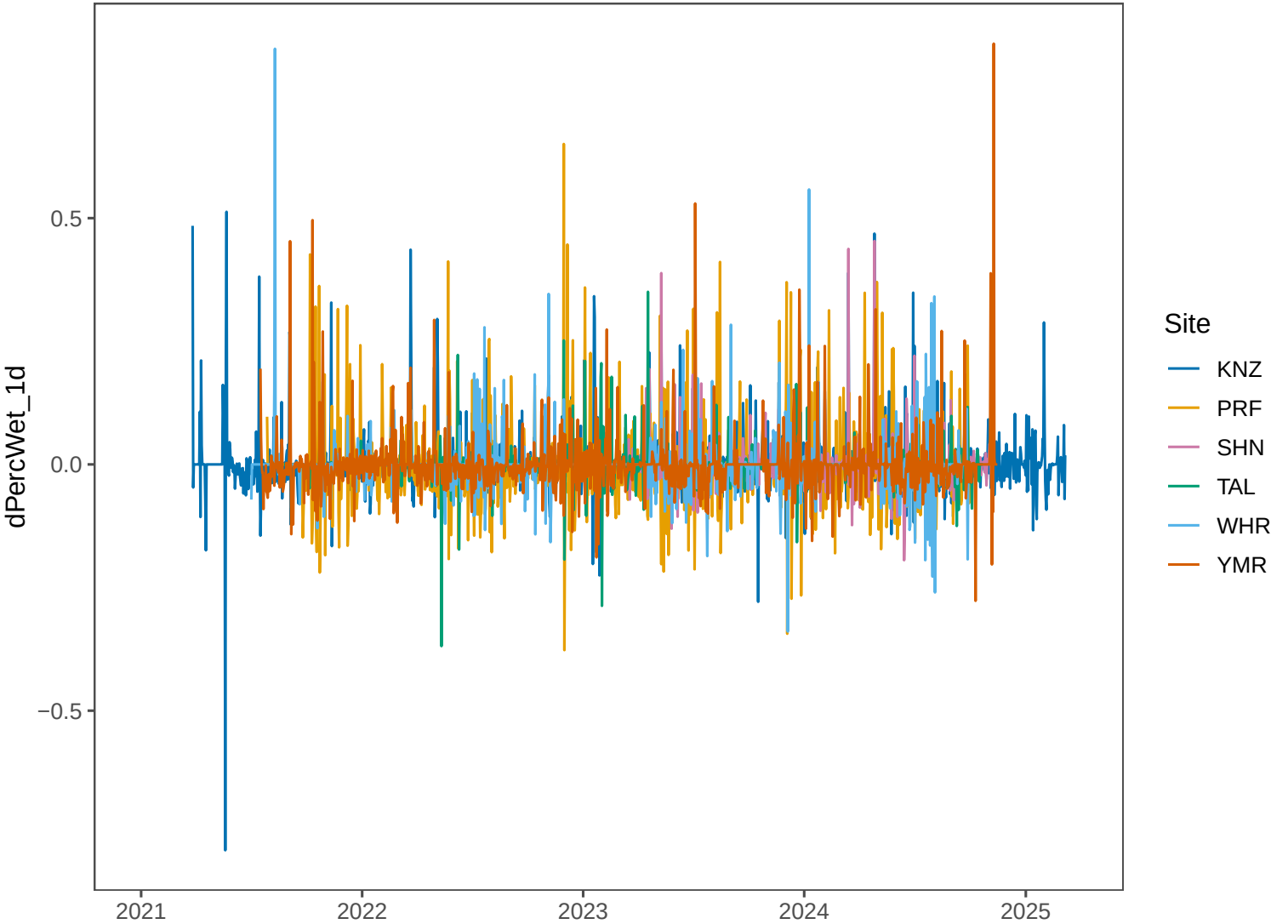
dPercWet_1d
0.5
0.0
−0.5
2021
2022
2023
2024
2025
Site
KNZ
PRF
SHN
TAL
WHR
YMR

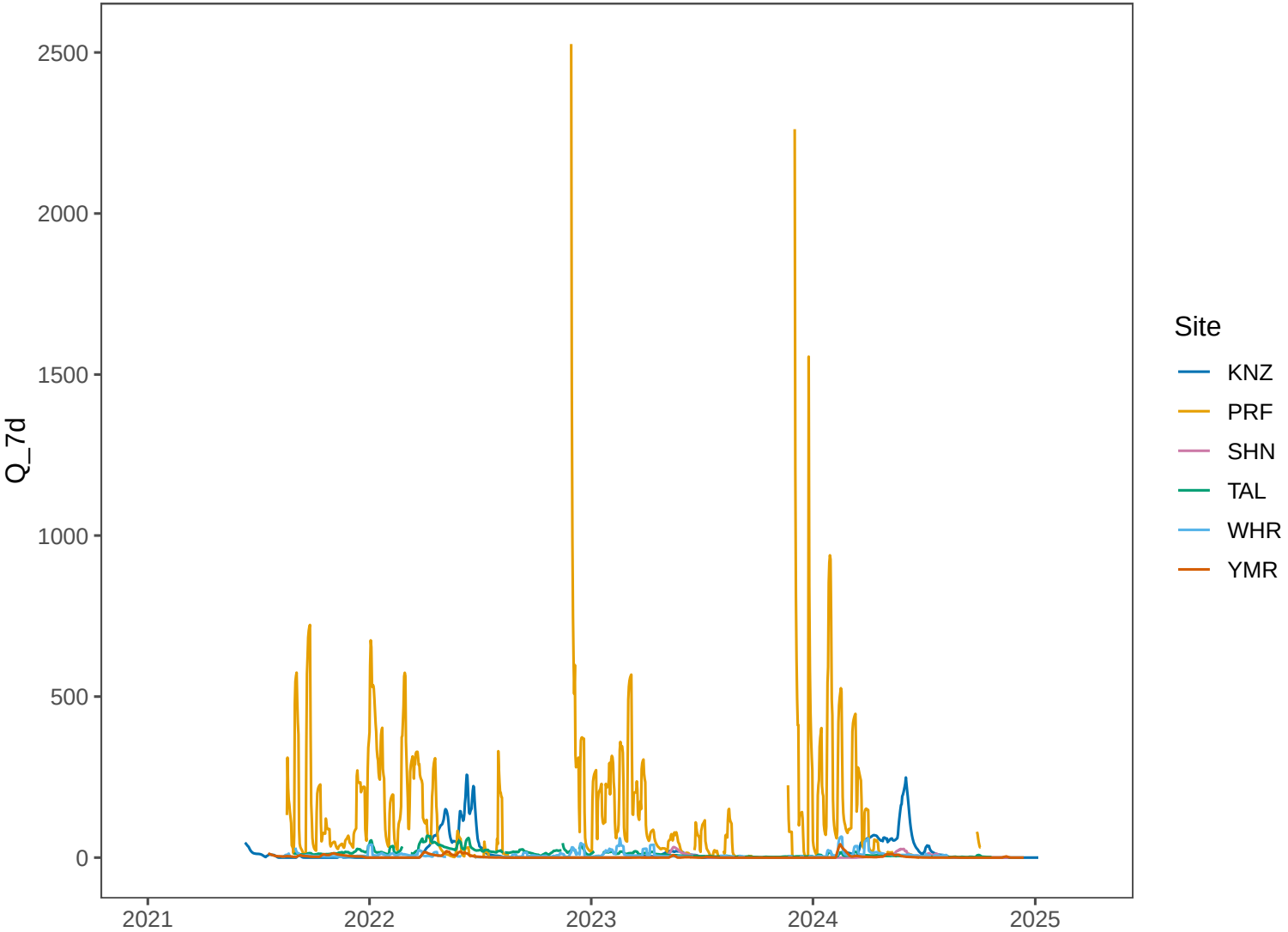
Q_7d
2500
2000
1500
1000
500
0
2021
2022
2023
2024
2025
Site
KNZ
PRF
SHN
TAL
WHR
YMR

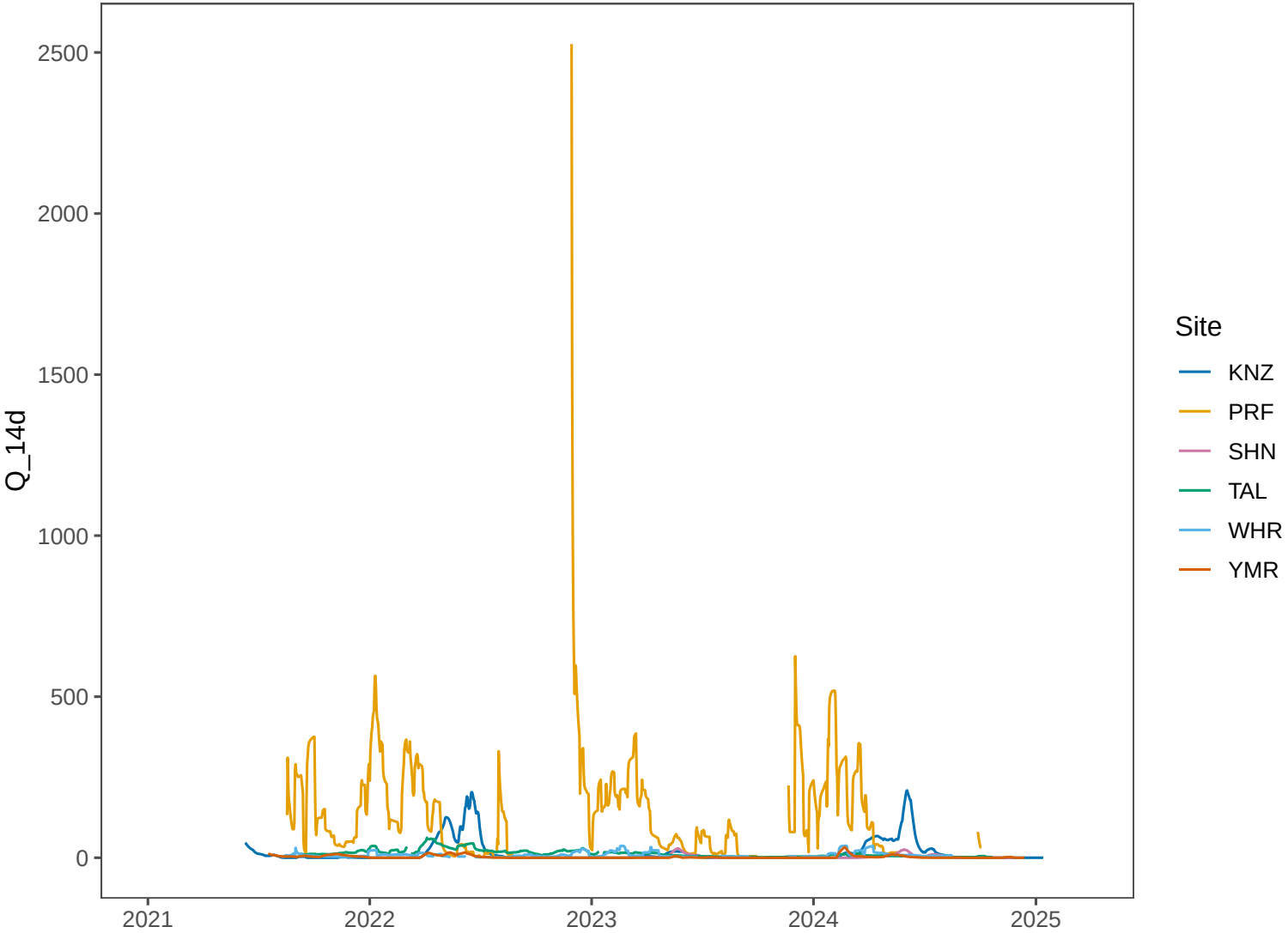
Q_14d
2500
2000
1500
1000
500
0
2021
2022
2023
2024
2025
Site
KNZ
PRF
SHN
TAL
WHR
YMR

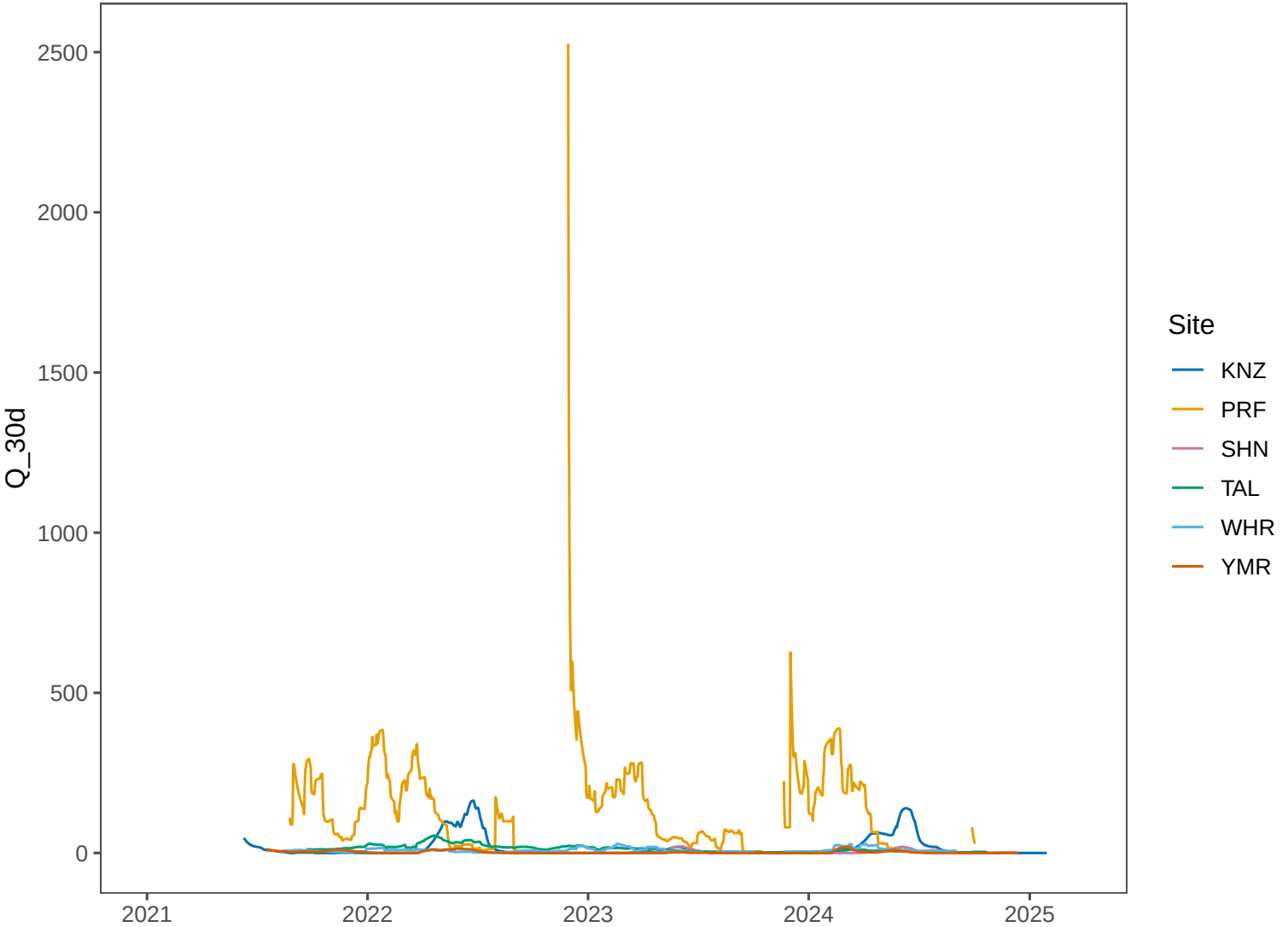
Q_30d
2500
2000
1500
1000
500
0
2021
2022
2023
2024
2025
Site
KNZ
PRF
SHN
TAL
WHR
YMR

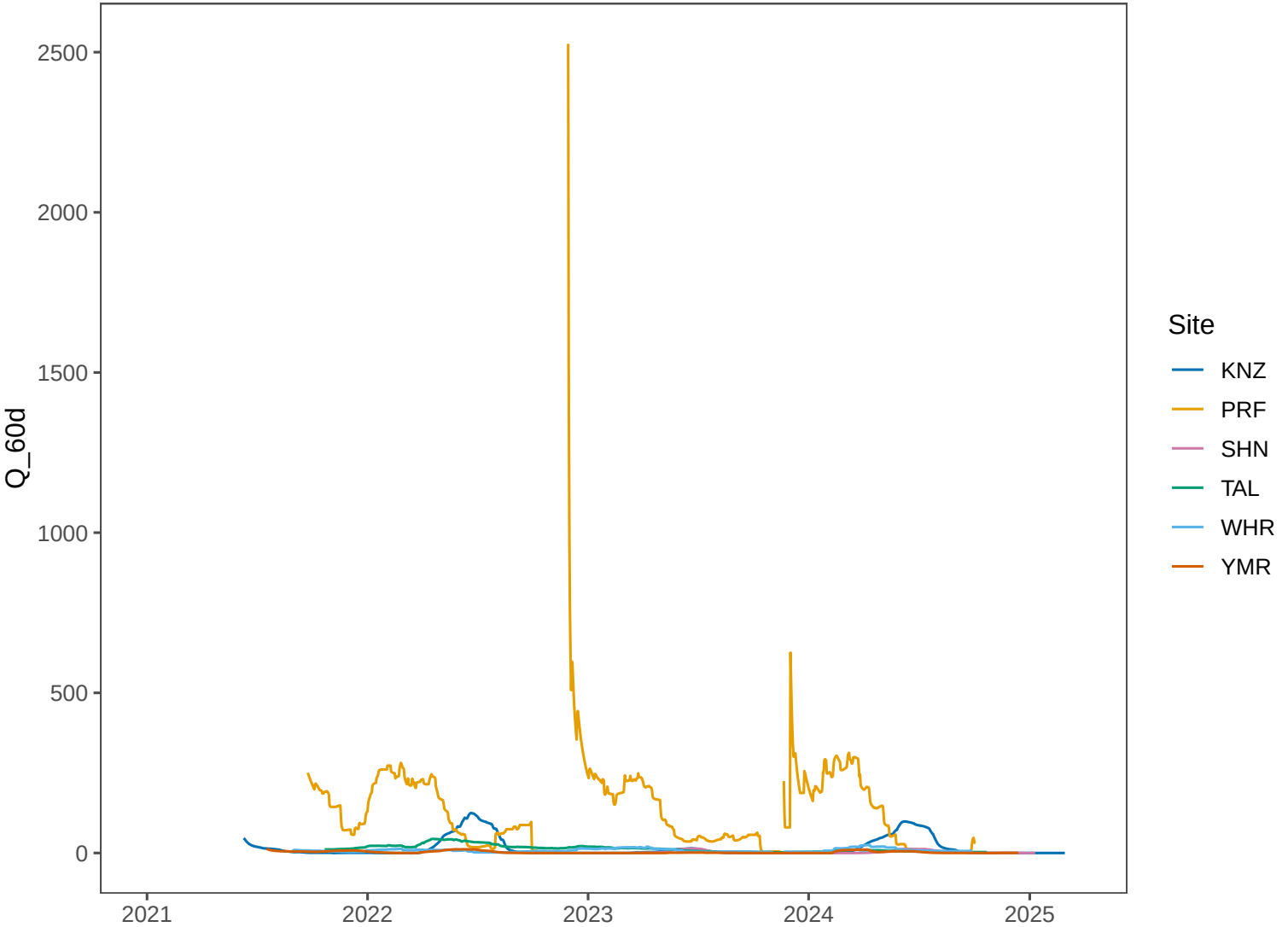
Q_60d
2500
2000
1500
1000
500
0
2021
2022
2023
2024
2025
Site
KNZ
PRF
SHN
TAL
WHR
YMR

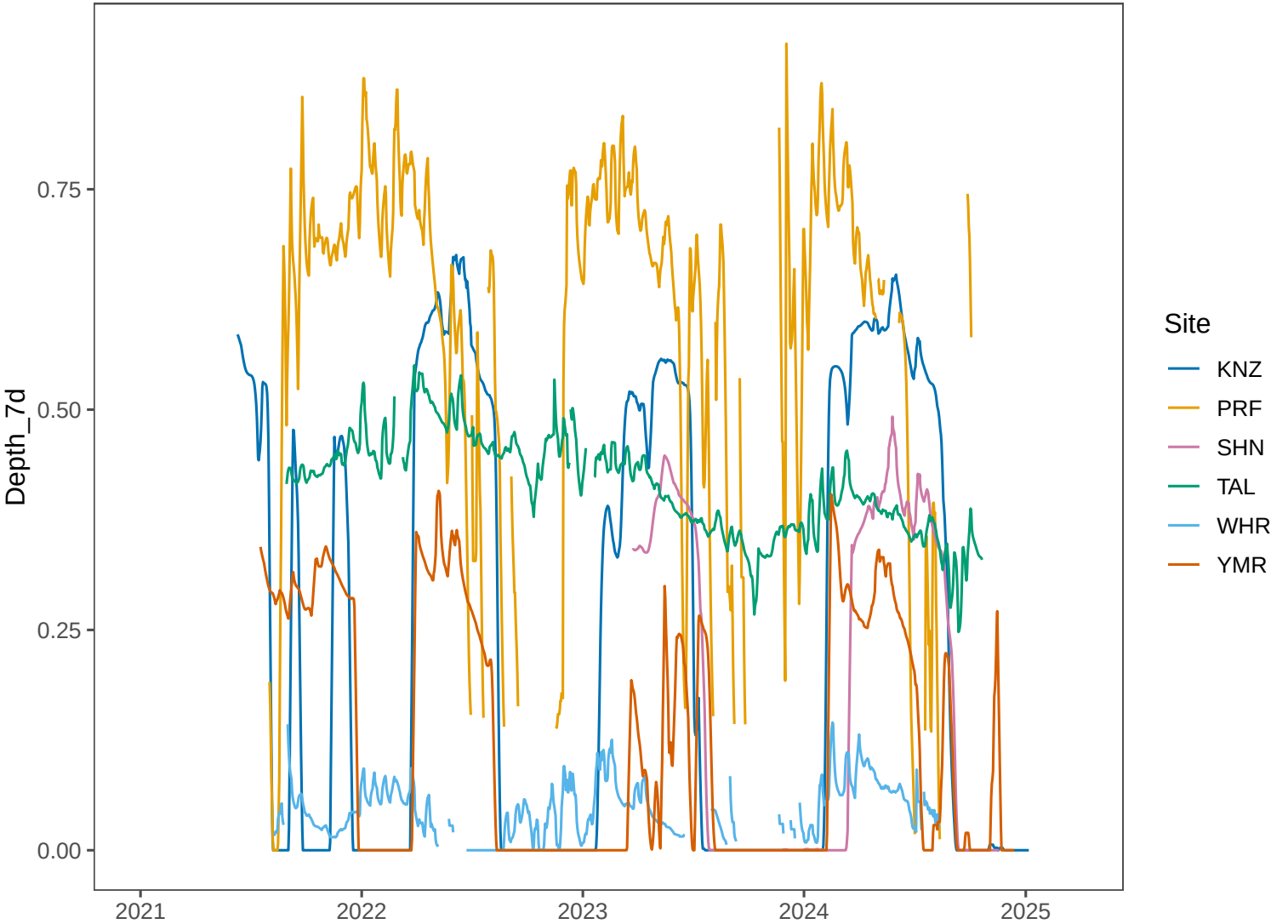
Depth_7d
0.75
0.50
0.25
0.00
2021
2022
2023
2024
2025
Site
KNZ
PRF
SHN
TAL
WHR
YMR

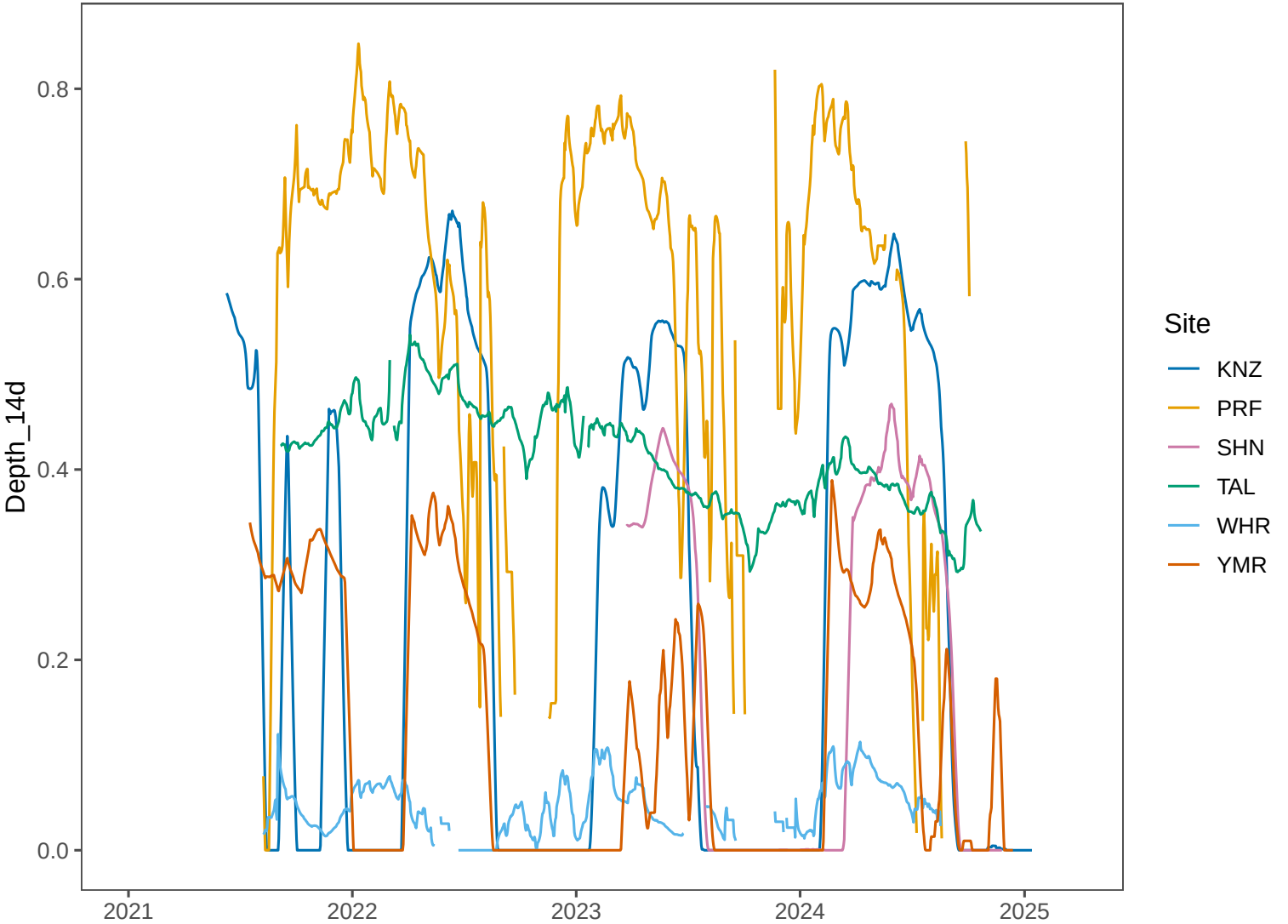
Depth_14d
0.0
0.2
0.4
0.6
0.8
2021
2022
2023
2024
2025
Site
KNZ
PRF
SHN
TAL
WHR
YMR

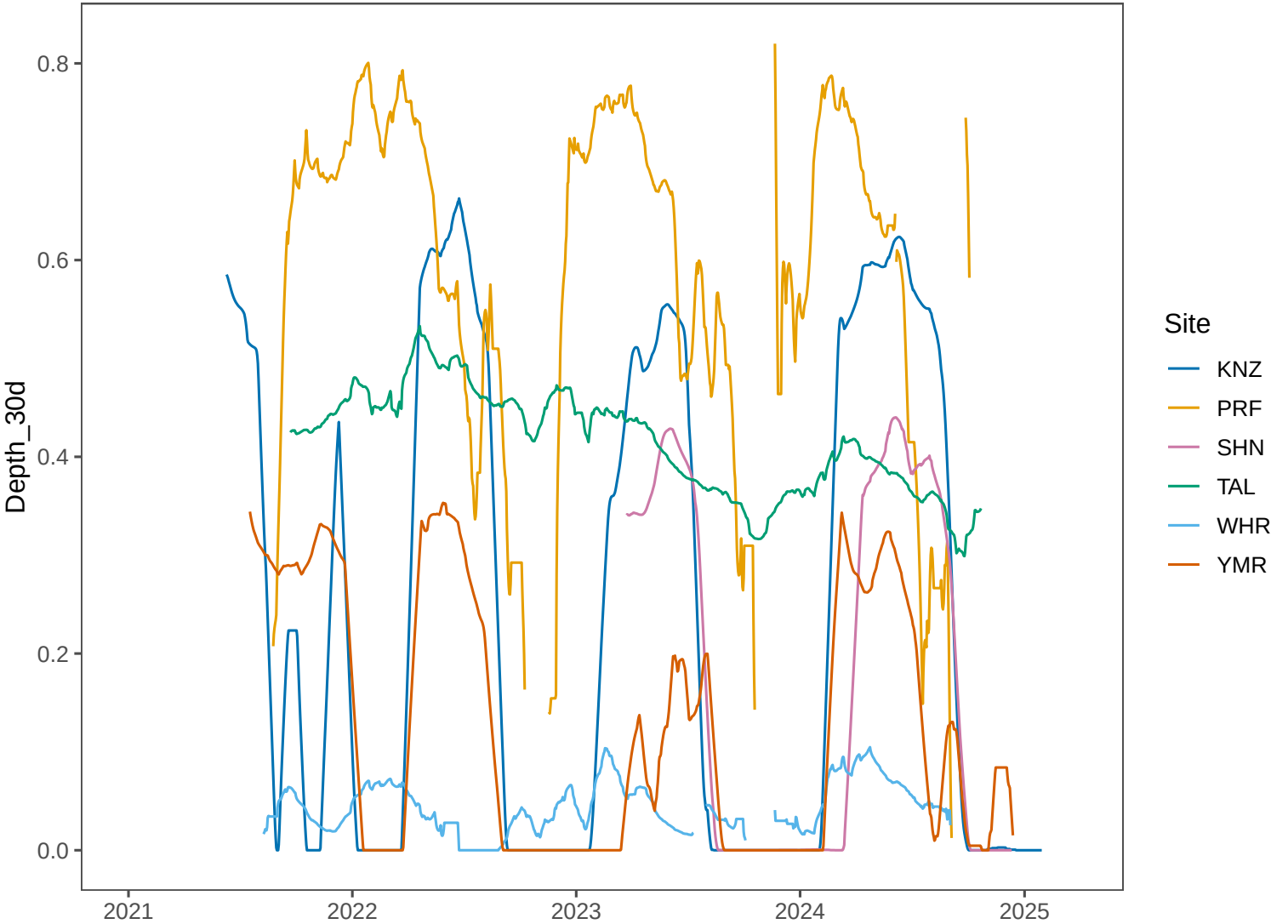
Depth_30d
0.8
0.6
0.4
0.2
0.0
2021
2022
2023
2024
2025
Site
KNZ
PRF
SHN
TAL
WHR
YMR

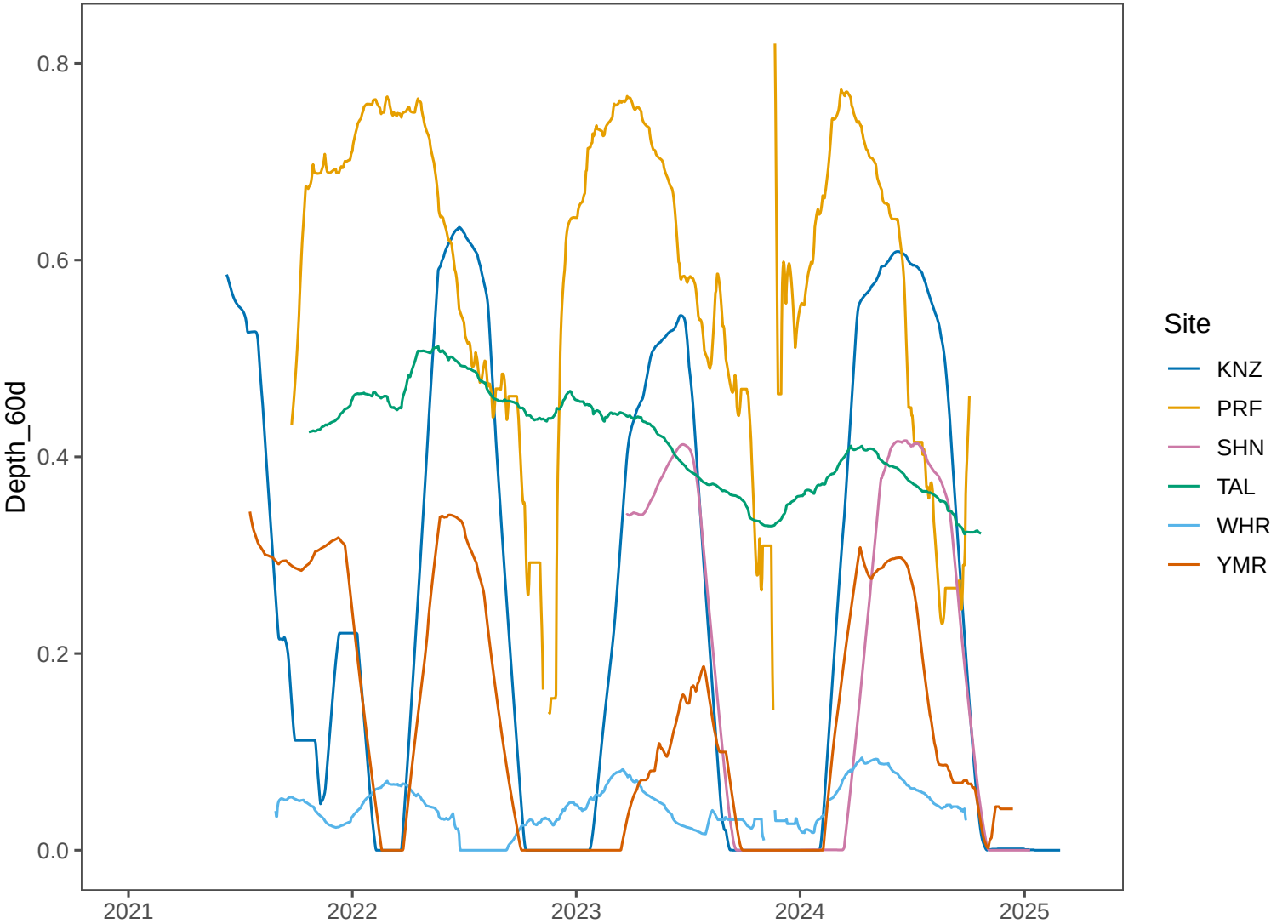
Depth_60d
0.8
0.6
0.4
0.2
0.0
2021
2022
2023
2024
2025
Site
KNZ
PRF
SHN
TAL
WHR
YMR

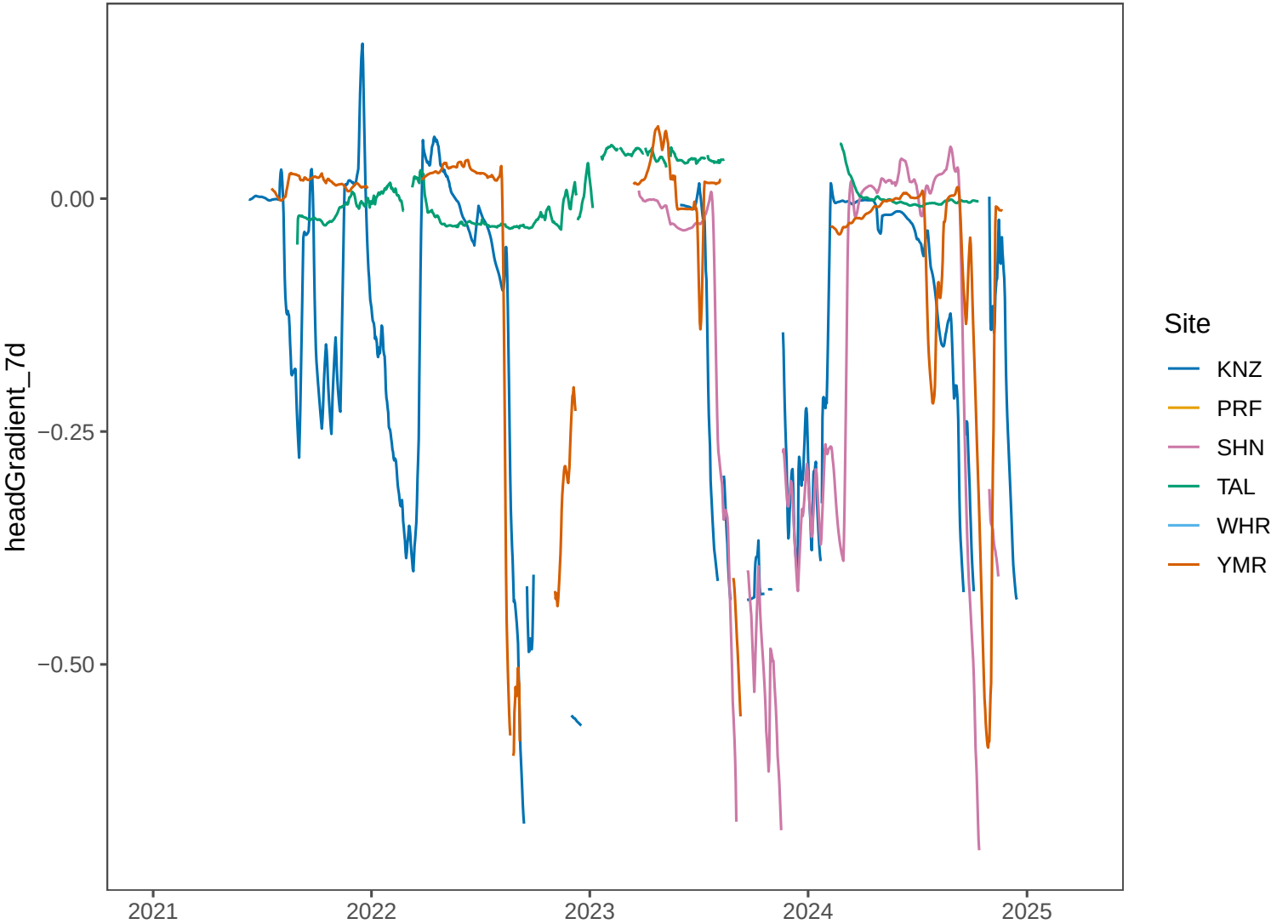
headGradient_7d
0.00
−0.25
−0.50
2021
2022
2023
2024
2025
Site
KNZ
PRF
SHN
TAL
WHR
YMR

headGradient_14d
0.00
−0.25
−0.50
2021
2022
2023
2024
2025
Site
KNZ
PRF
SHN
TAL
WHR
YMR

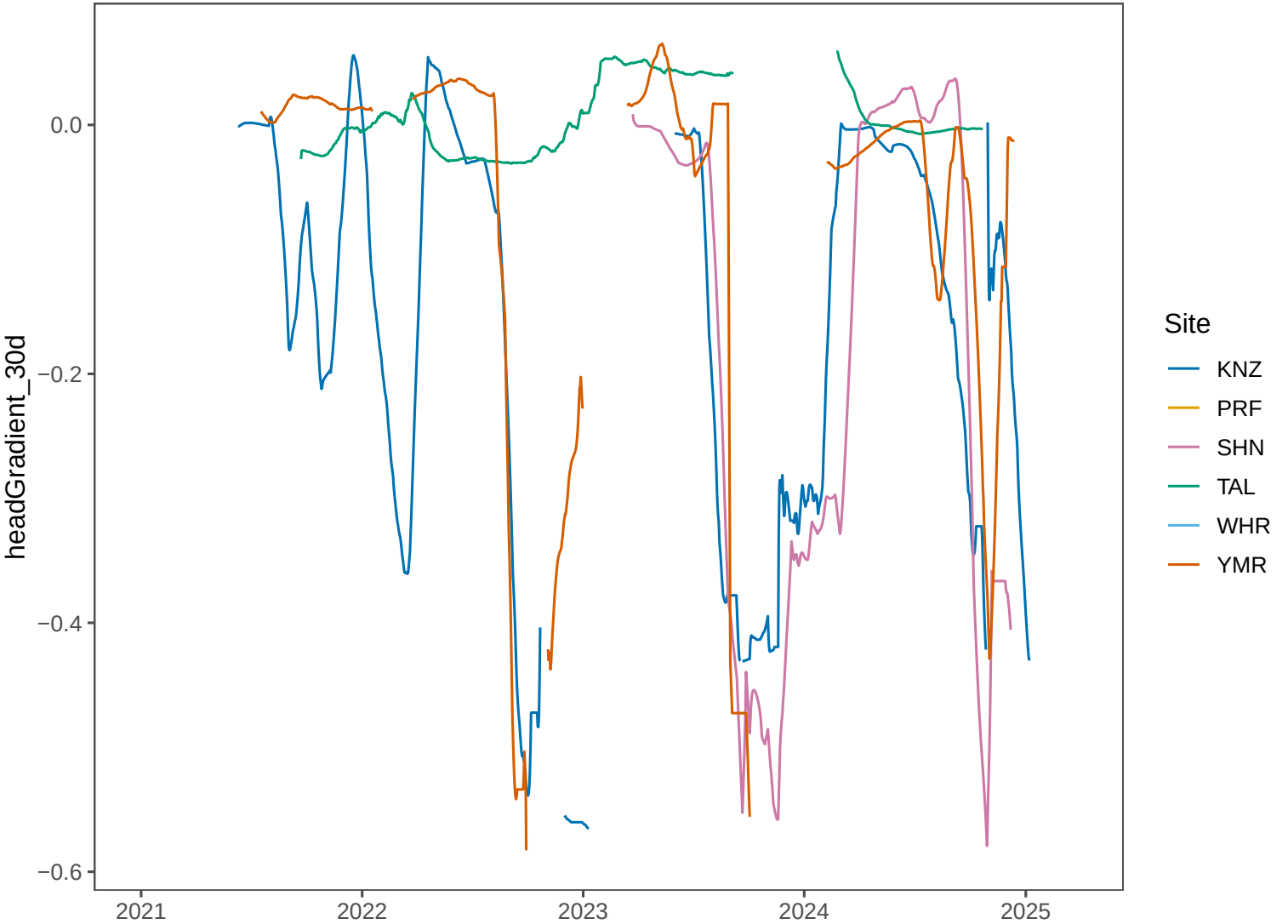
headGradient_30d
0.0
−0.2
−0.4
−0.6
2021
2022
2023
2024
2025
Site
KNZ
PRF
SHN
TAL
WHR
YMR

headGradient_60d
0.0
−0.2
−0.4
−0.6
2021
2022
2023
2024
2025
Site
KNZ
PRF
SHN
TAL
WHR
YMR

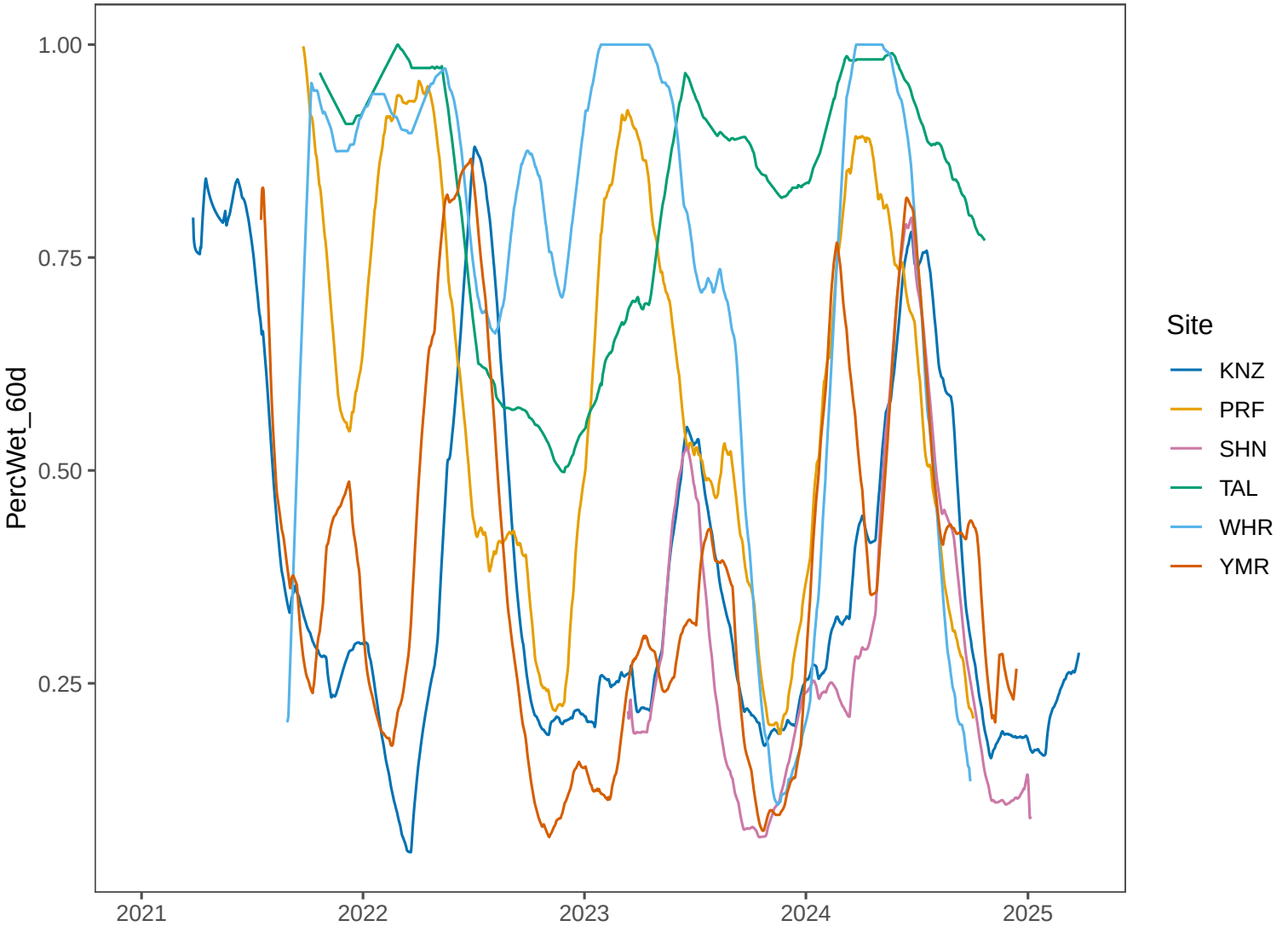
1.00
0.75
0.50
0.25
PercWet_60d
2021
2022
2023
2024
2025
Site
KNZ
PRF
SHN
TAL
WHR
YMR

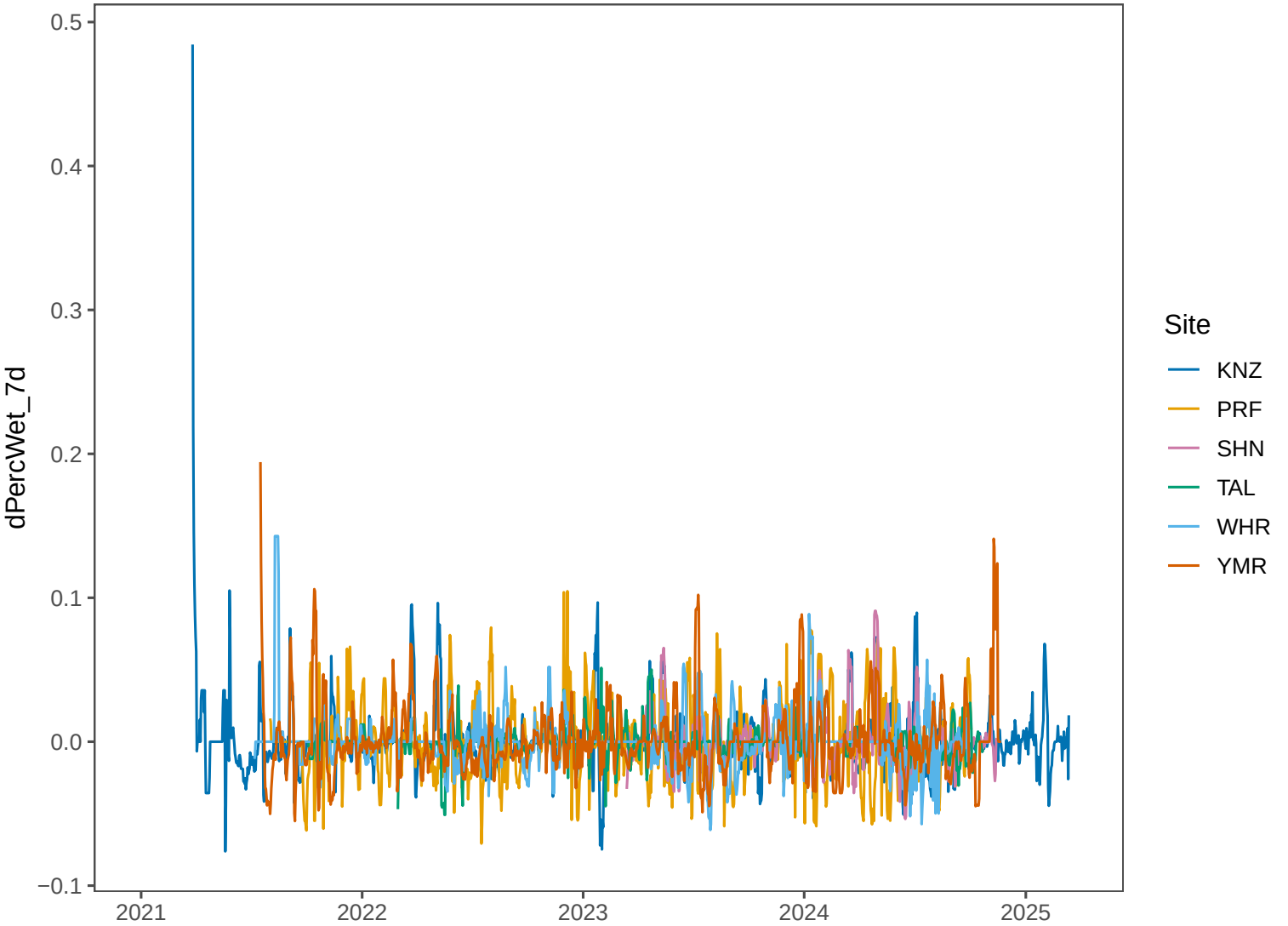
dPercWet_7d
0.5
0.4
0.3
0.2
0.1
0.0
−0.1
2021
2022
2023
2024
2025
Site
KNZ
PRF
SHN
TAL
WHR
YMR

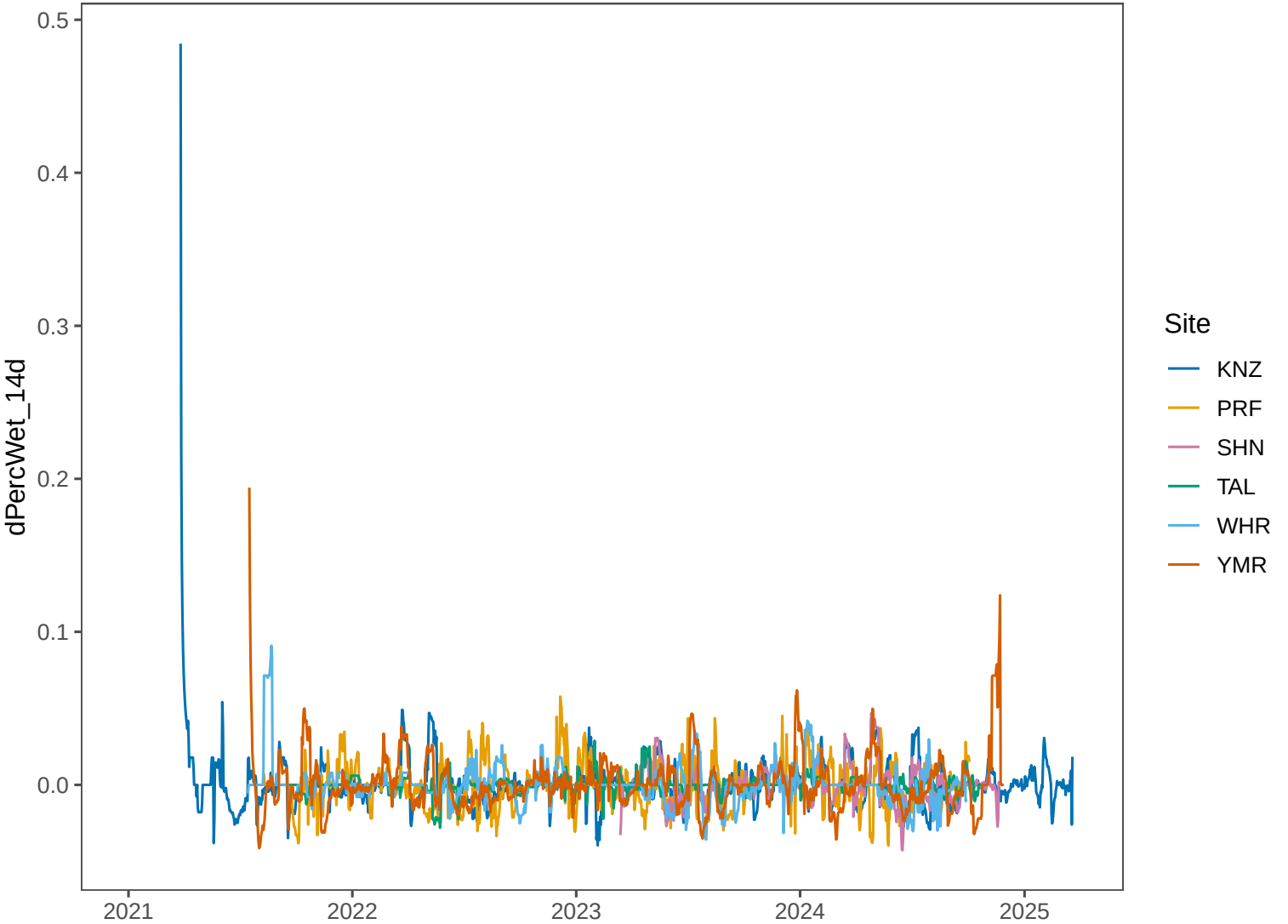
0.5
0.4
0.3
0.2
0.1
0.0
dPercWet_14d
2021
2022
2023
2024
2025
Site
KNZ
PRF
SHN
TAL
WHR
YMR

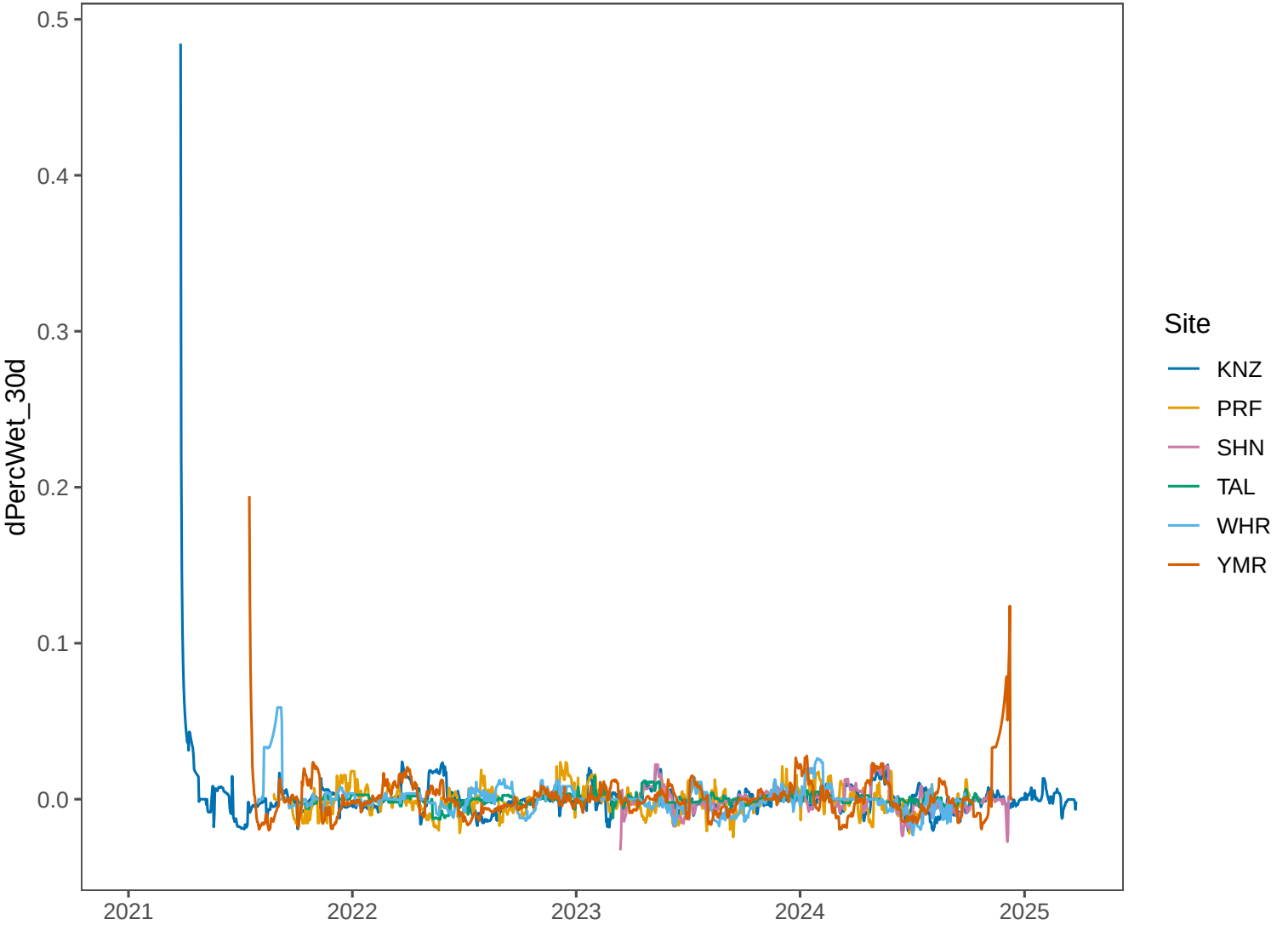
0.5
0.4
0.3
0.2
0.1
0.0
dPercWet_30d
2021
2022
2023
2024
2025
Site
KNZ
PRF
SHN
TAL
WHR
YMR

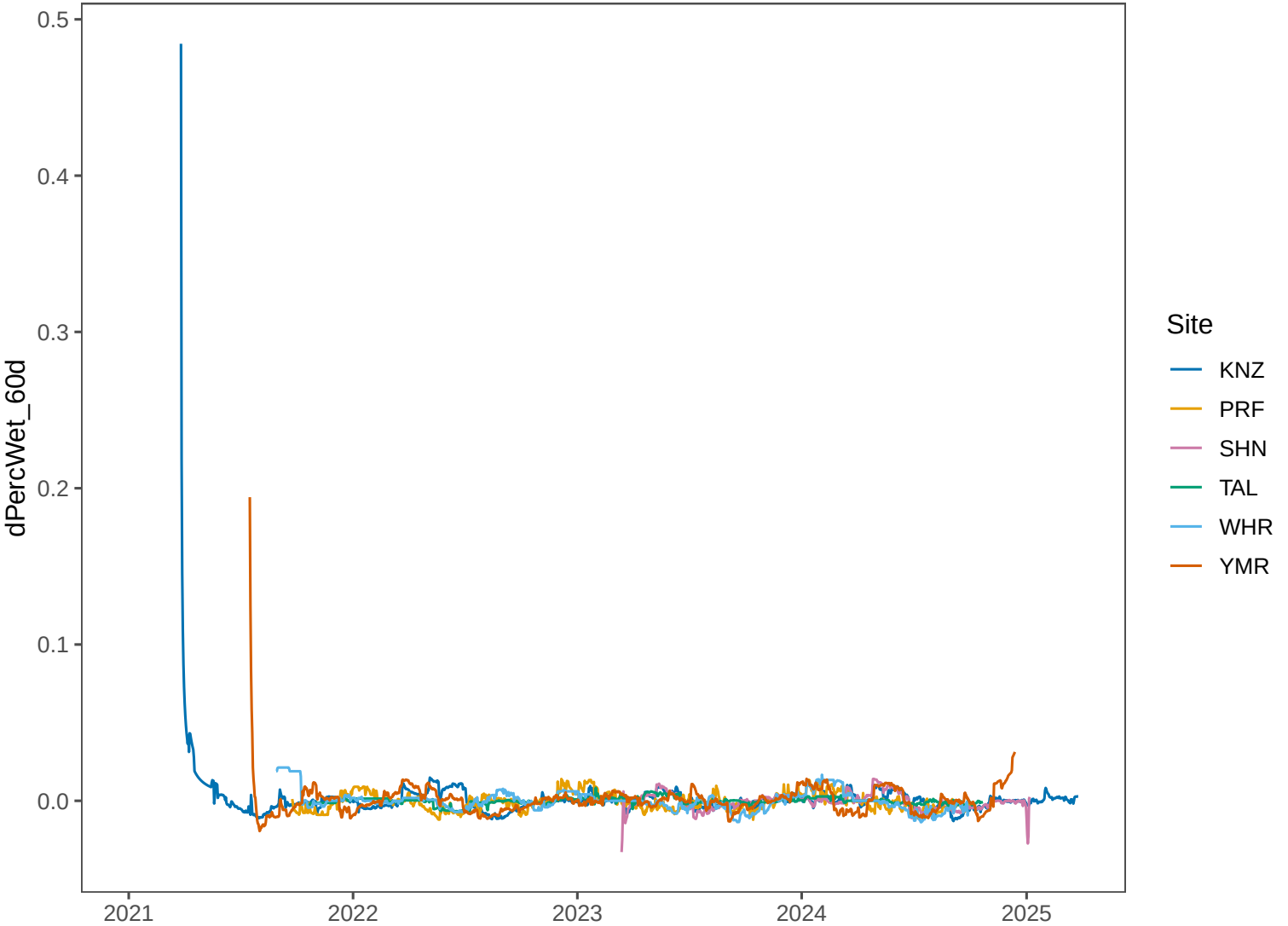
0.5
0.4
0.3
0.2
0.1
0.0
dPercWet_60d
2021
2022
2023
2024
2025
Site
KNZ
PRF
SHN
TAL
WHR
YMR

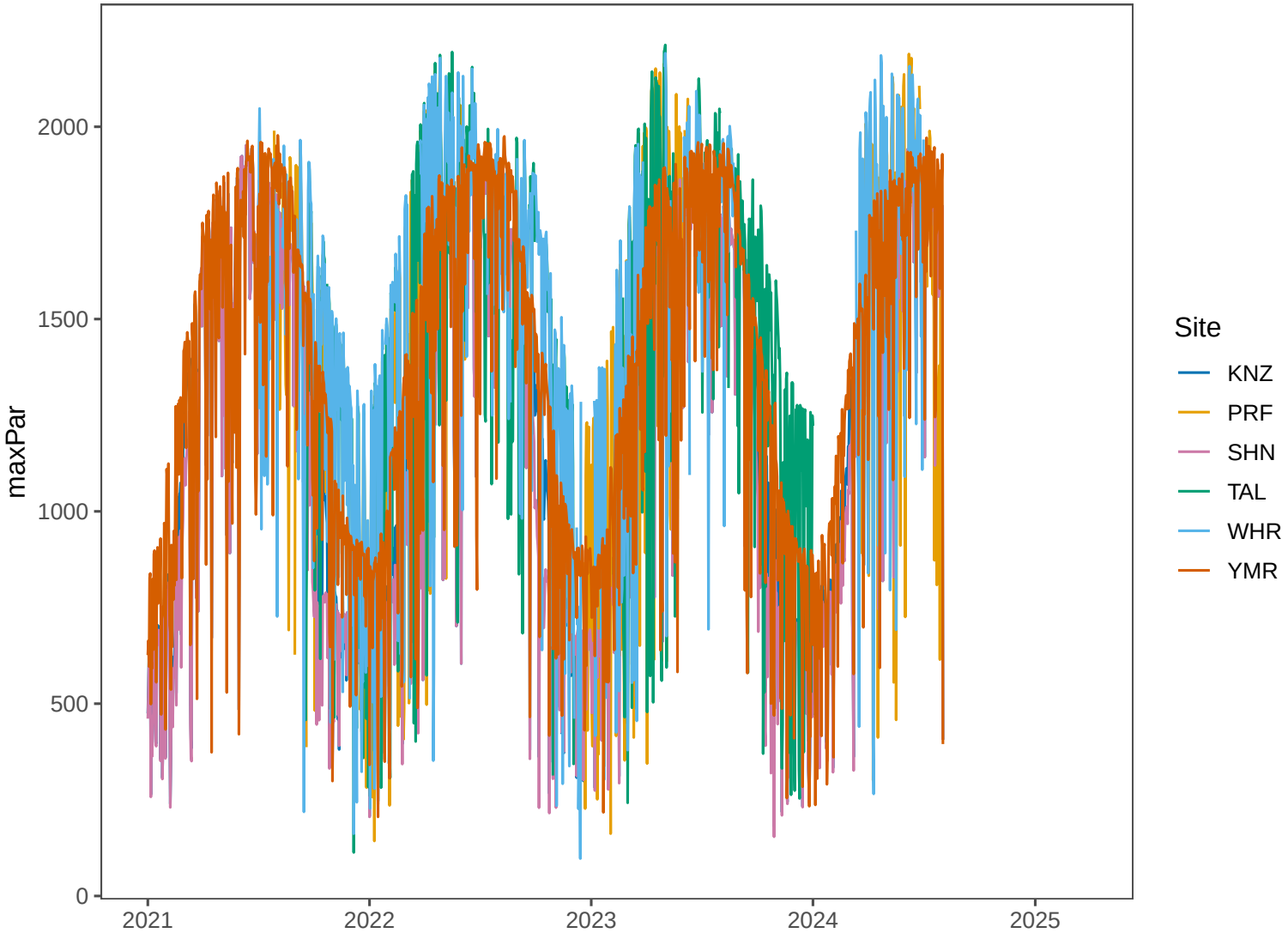
maxPar
0
500
1000
1500
2000
2021
2022
2023
2024
2025
Site
KNZ
PRF
SHN
TAL
WHR
YMR

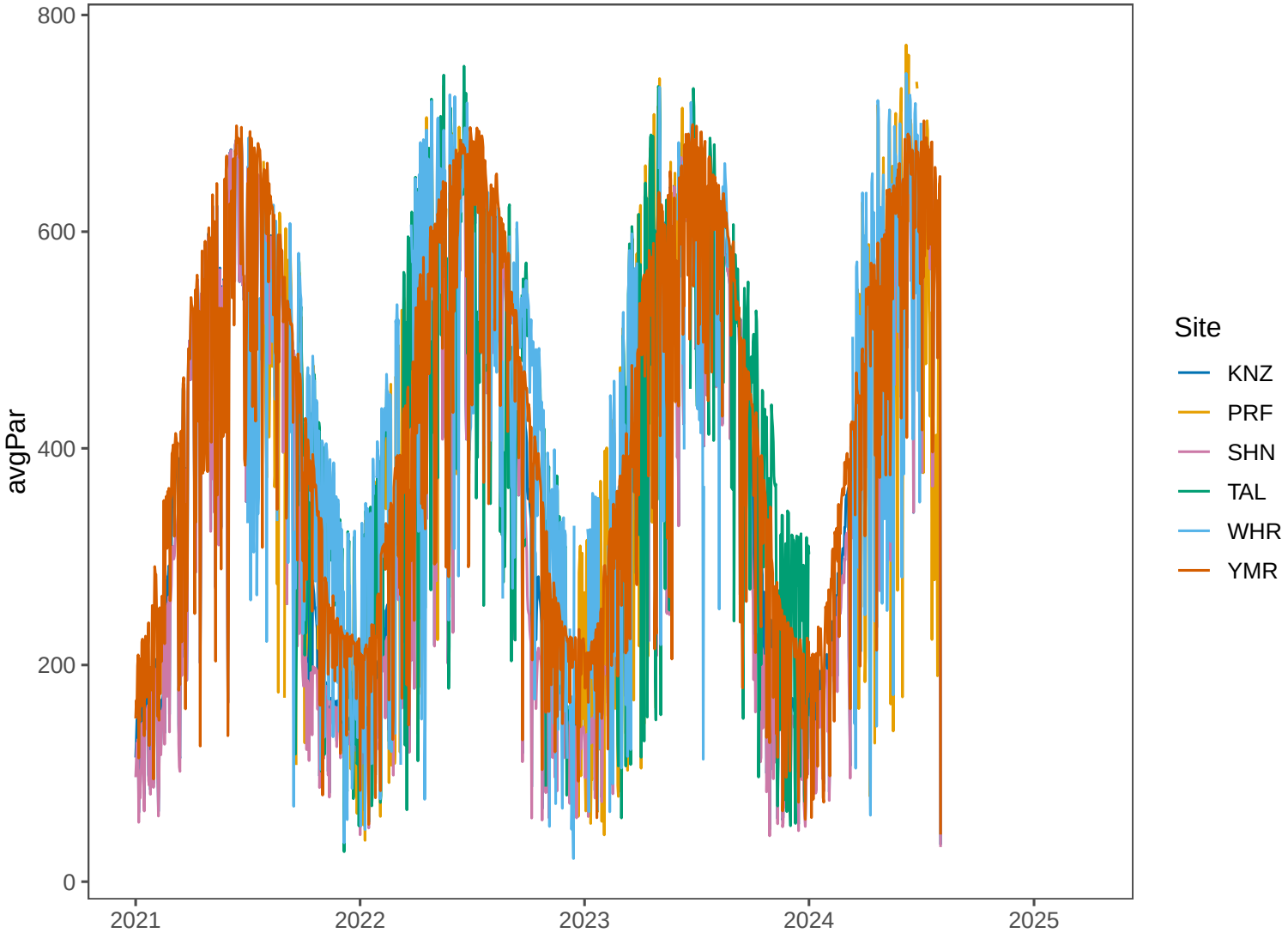
800
600
400
200
0
avgPar
2021
2022
2023
2024
2025
Site
KNZ
PRF
SHN
TAL
WHR
YMR

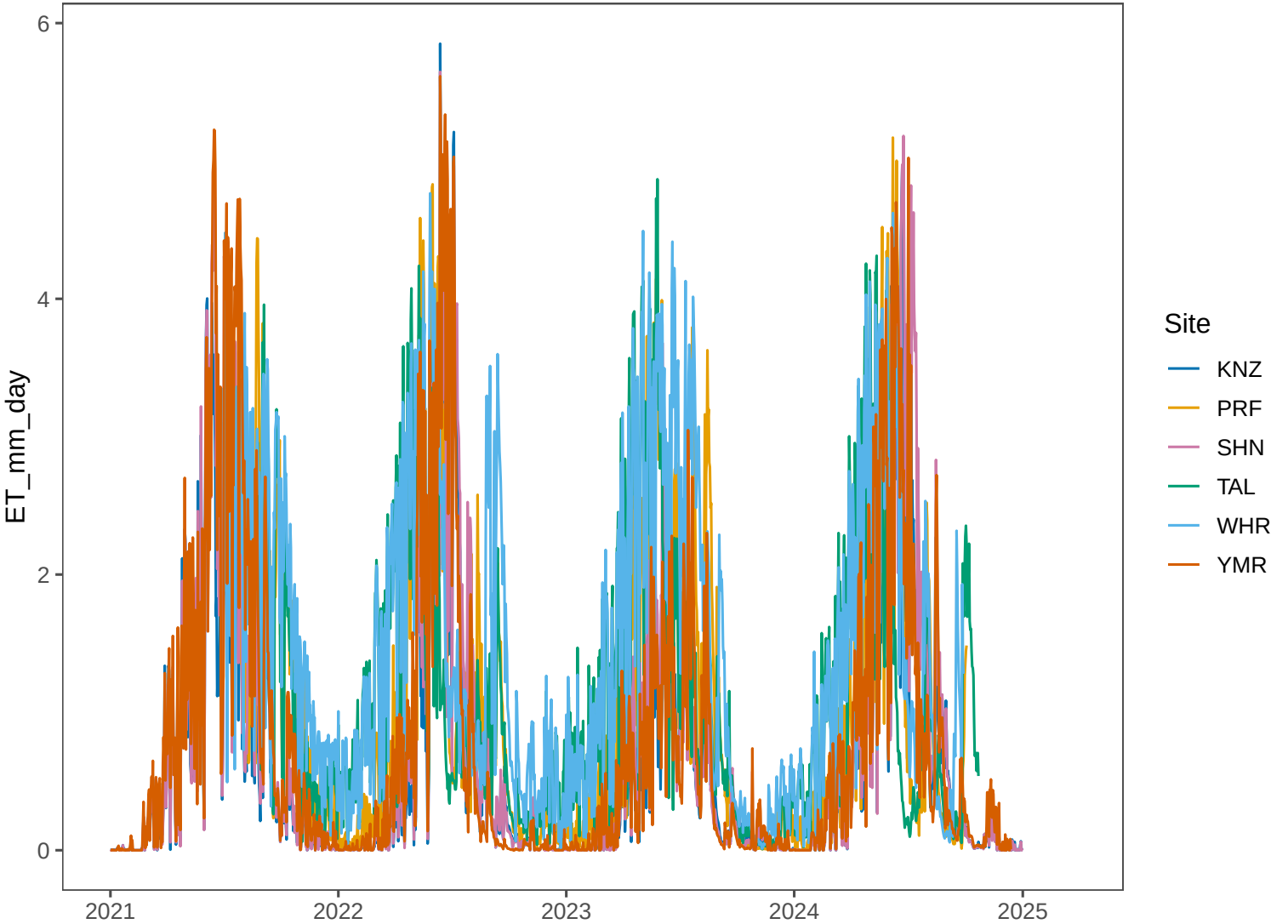
ET_mm_day
6
4
2
0
2021
2022
2023
2024
2025
Site
KNZ
PRF
SHN
TAL
WHR
YMR

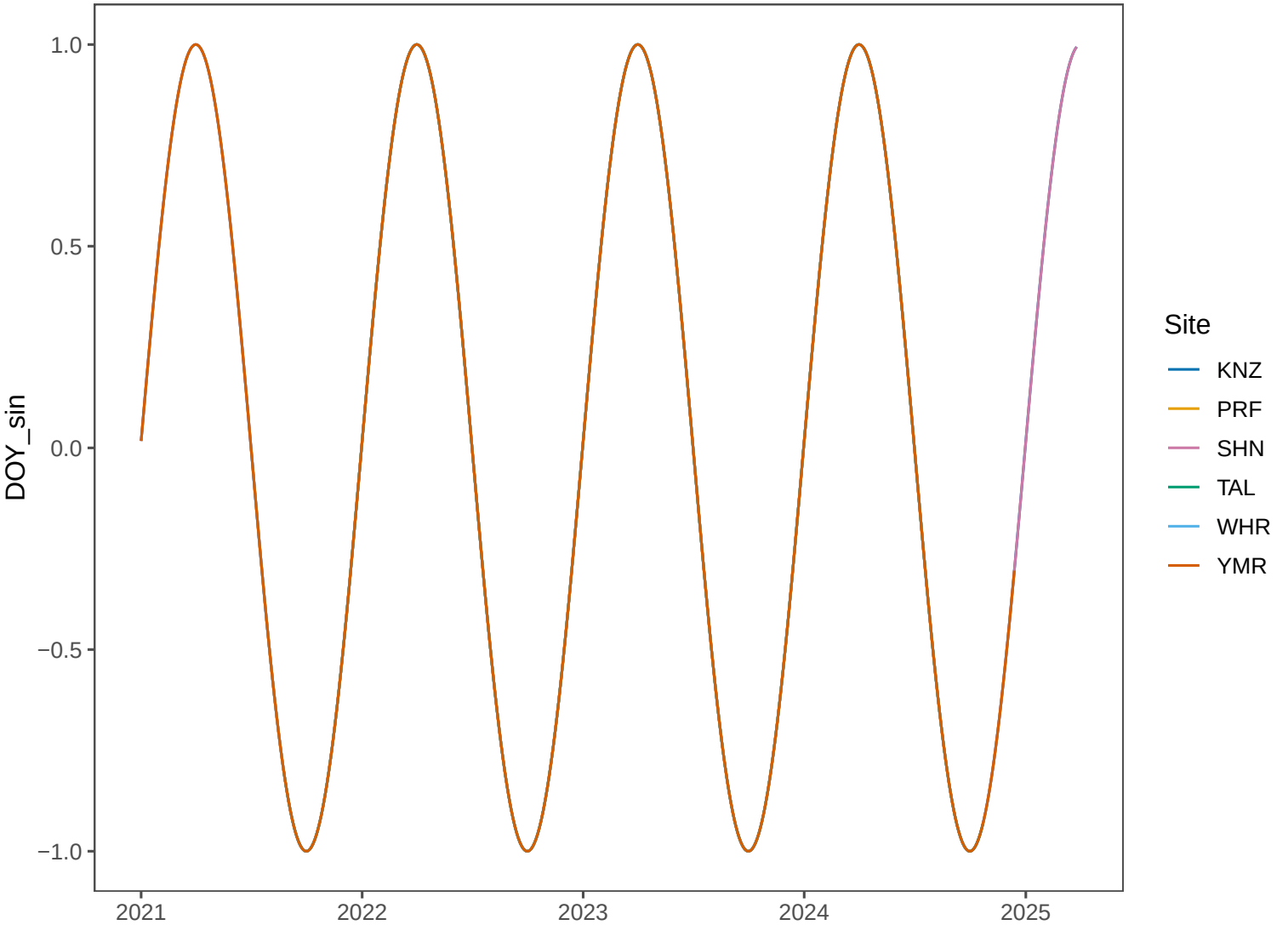
1.0
0.5
0.0
−0.5
−1.0
DOY_sin
2021
2022
2023
2024
2025
Site
KNZ
PRF
SHN
TAL
WHR
YMR

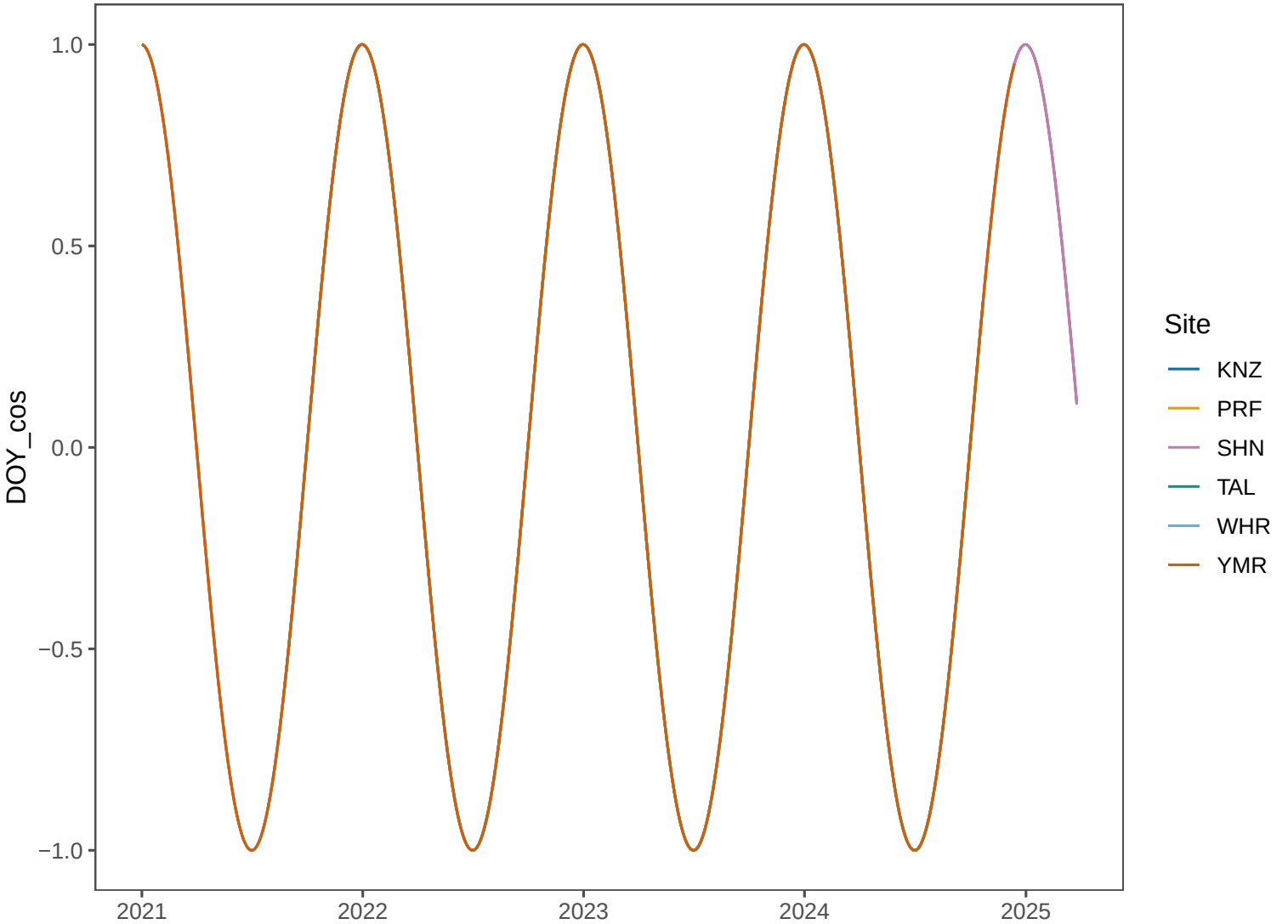
1.0
0.5
0.0
−0.5
−1.0
DOY_cos
2021
2022
2023
2024
2025
Site
KNZ
PRF
SHN
TAL
WHR
YMR

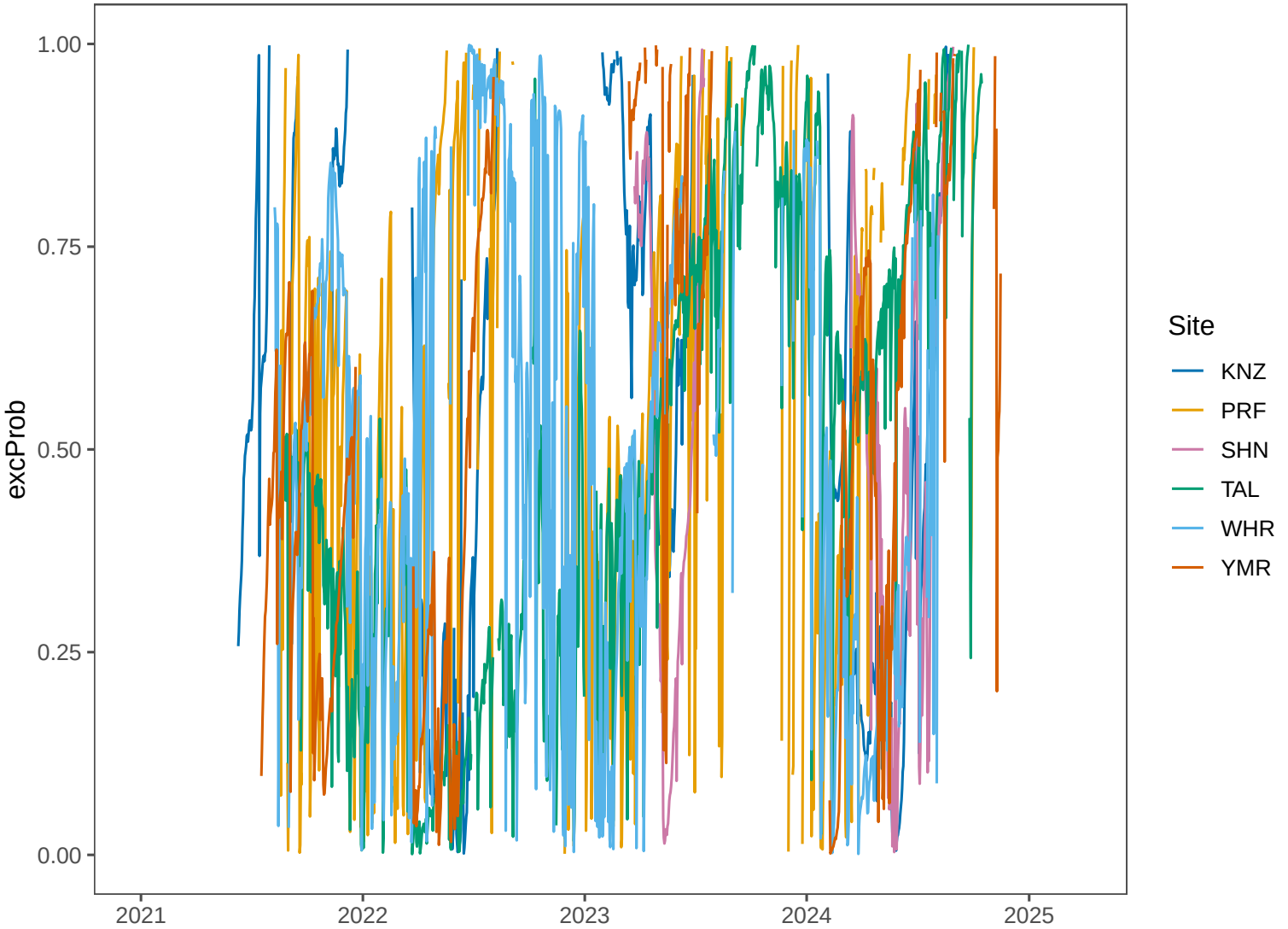
1.00
0.75
0.50
0.25
0.00
excProb
2021
2022
2023
2024
2025
Site
KNZ
PRF
SHN
TAL
WHR
YMR

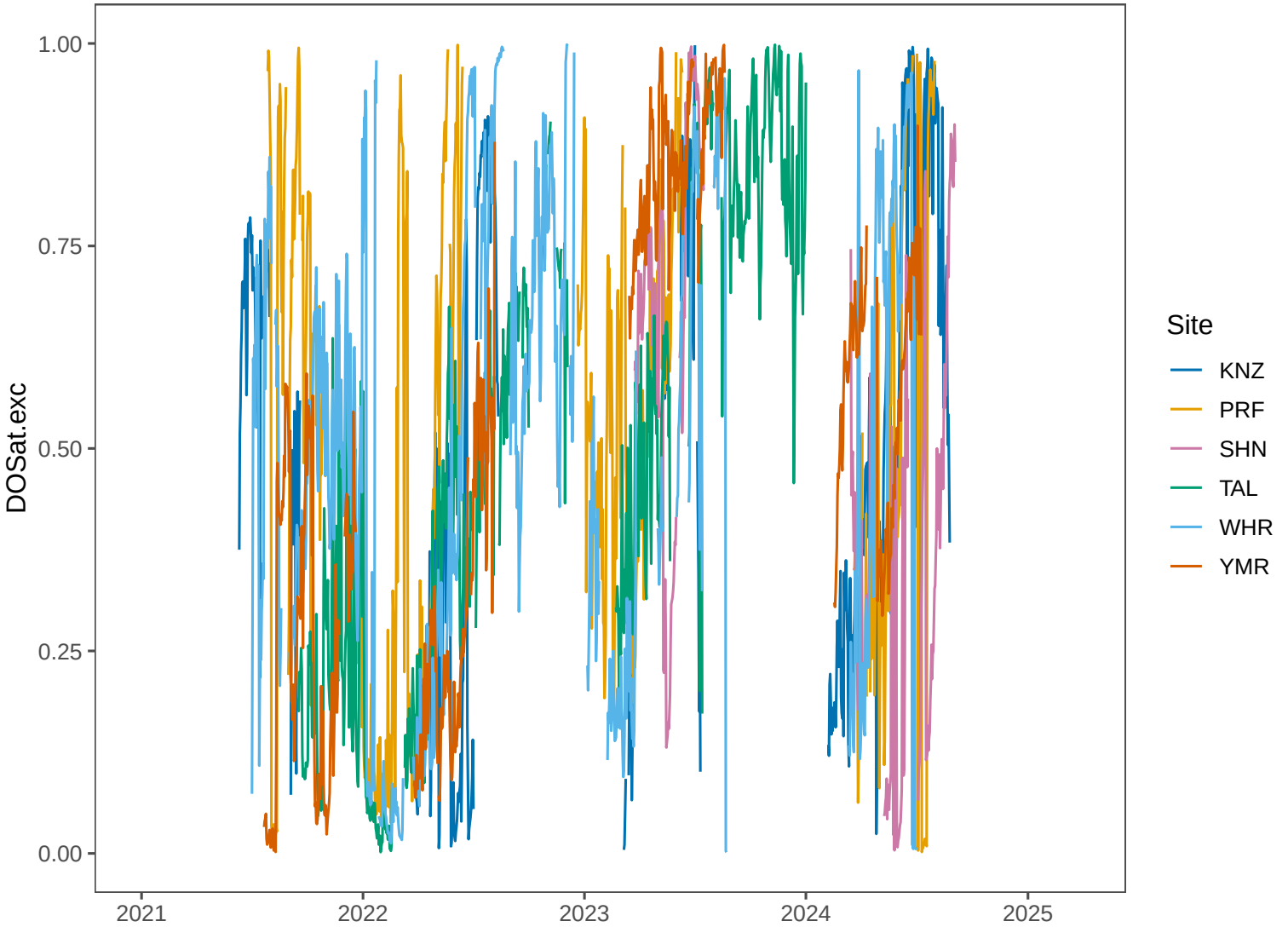
DOSat.exc
1.00
0.75
0.50
0.25
0.00
2021
2022
2023
2024
2025
Site
KNZ
PRF
SHN
TAL
WHR
YMR

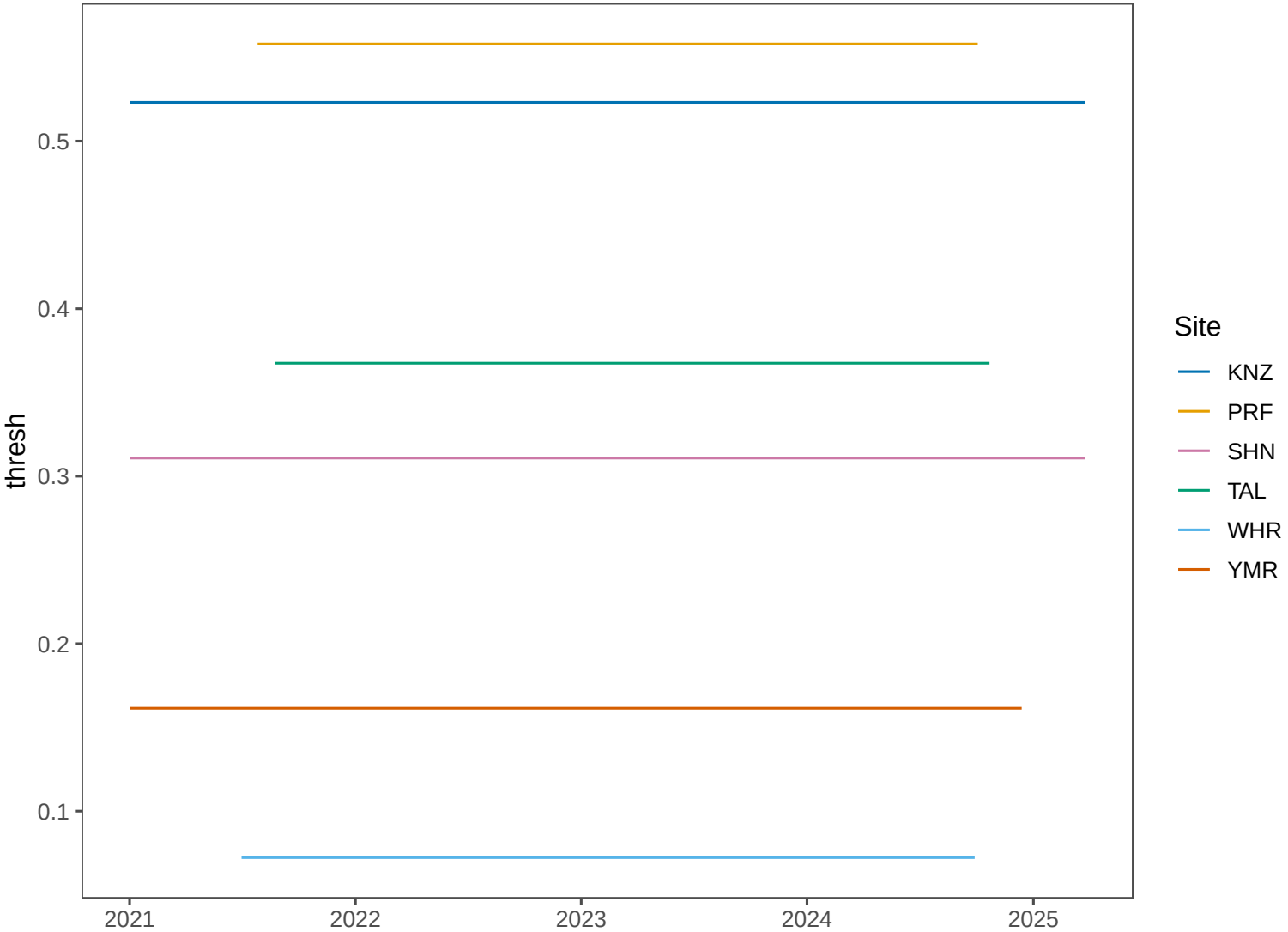
thresh
0.5
0.4
0.3
0.2
0.1
2021
2022
2023
2024
2025
Site
KNZ
PRF
SHN
TAL
WHR
YMR

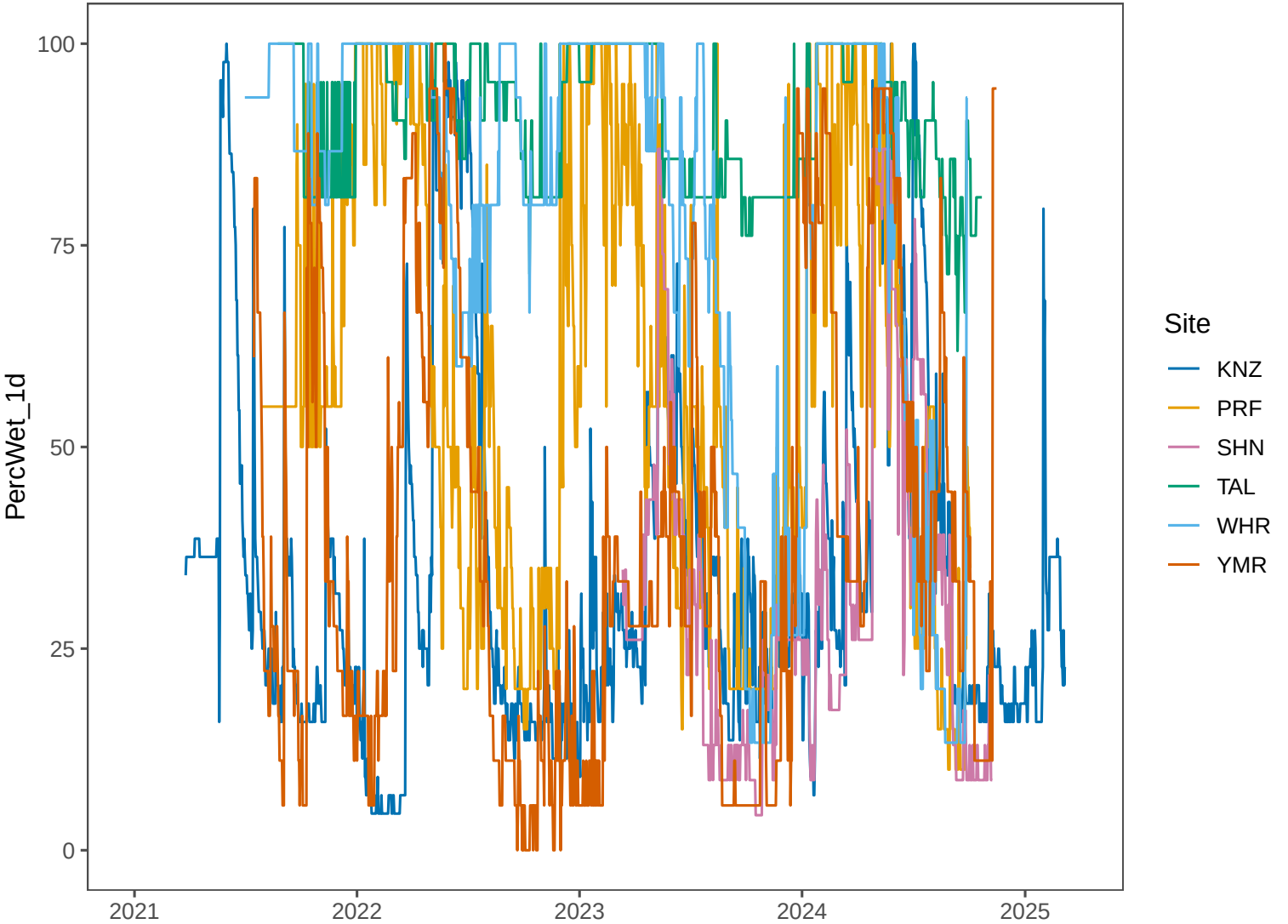
PercWet_1d
100
75
50
25
0
2021
2022
2023
2024
2025
Site
KNZ
PRF
SHN
TAL
WHR
YMR

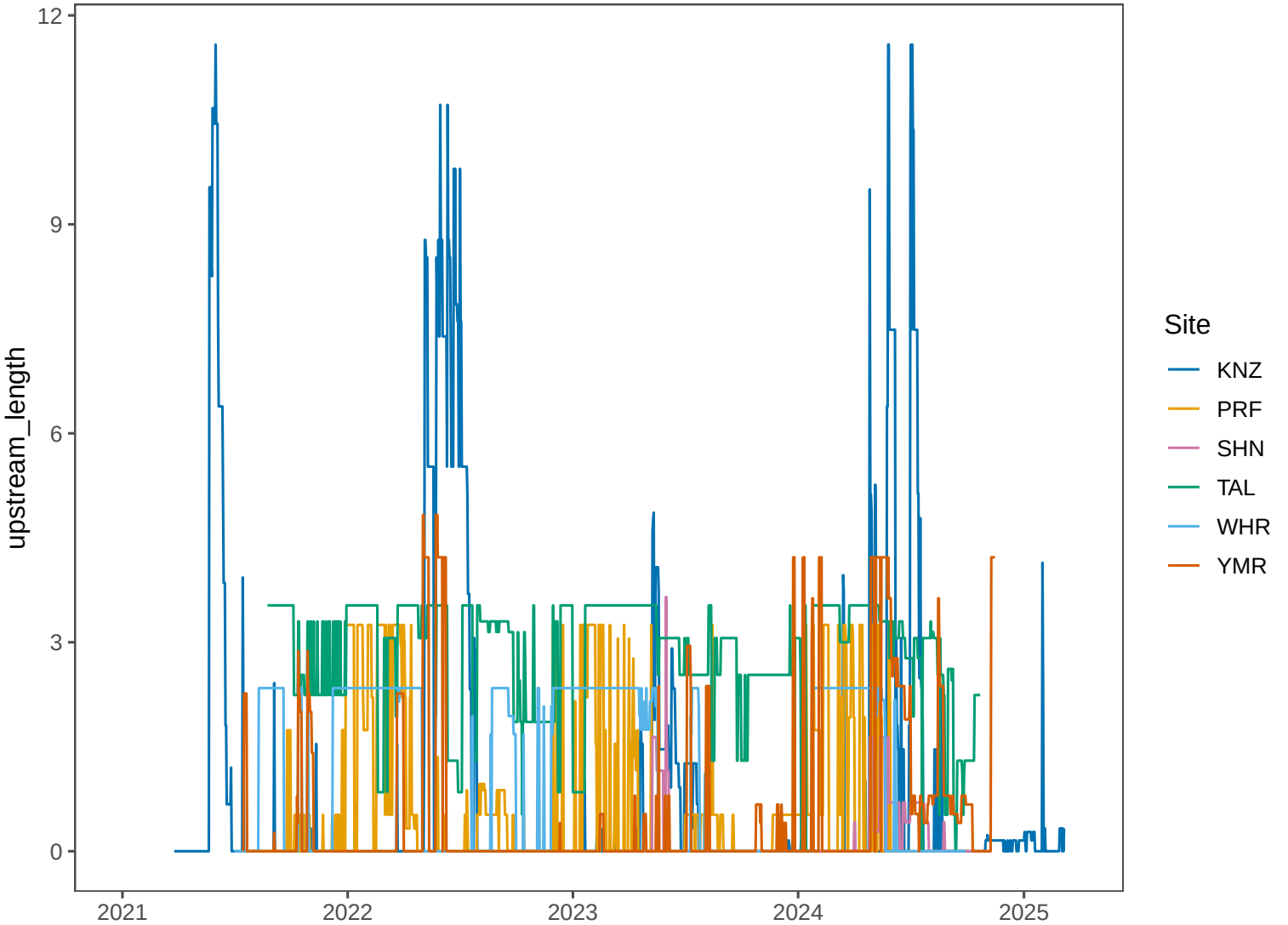
upstream_length
12
9
6
3
0
2021
2022
2023
2024
2025
Site
KNZ
PRF
SHN
TAL
WHR
YMR

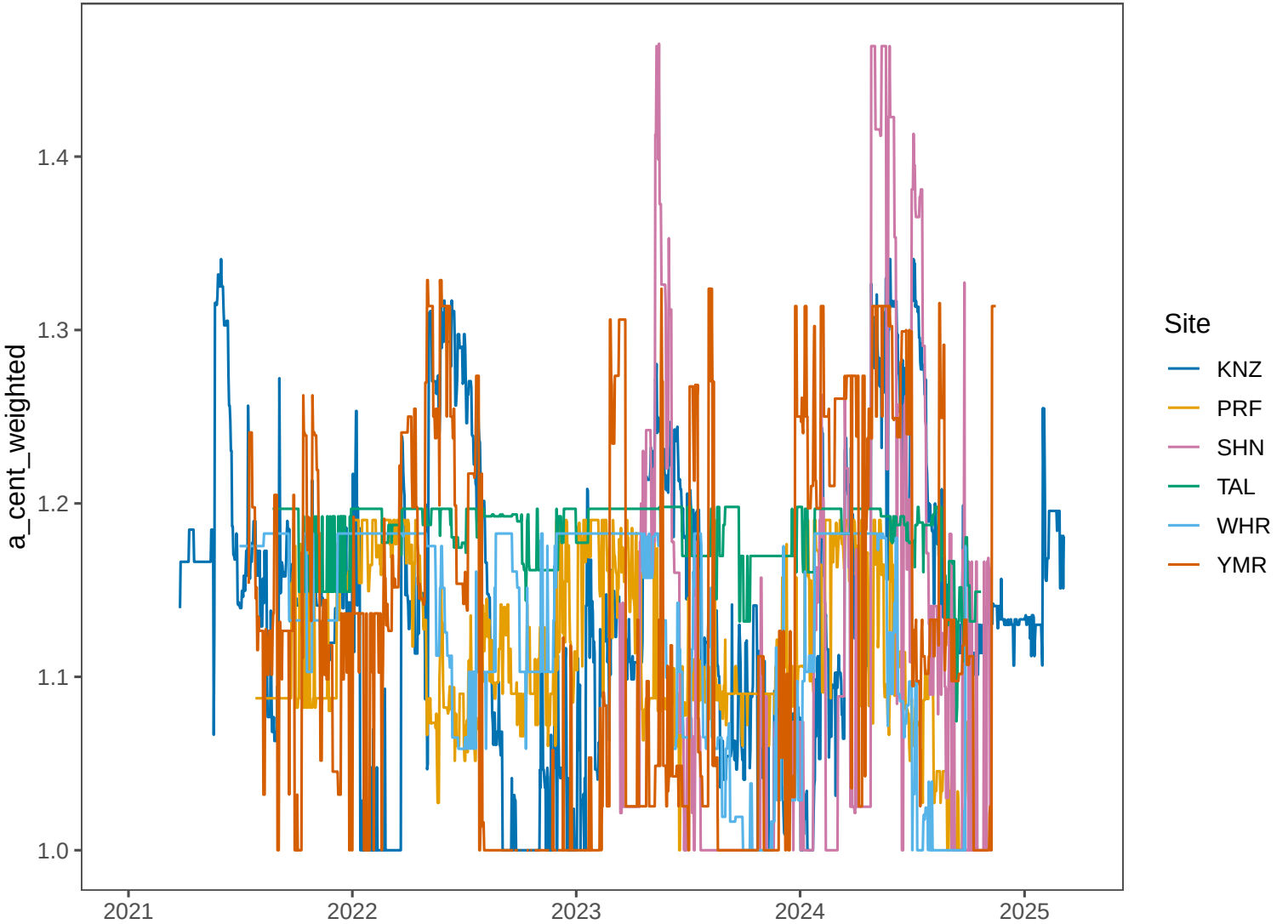
a_cent_weighted
1.4
1.3
1.2
1.1
1.0
2021
2022
2023
2024
2025
Site
KNZ
PRF
SHN
TAL
WHR
YMR